A Project Report on

SMART WASTE MANAGEMENT USING INTERNET OF THINGS

submitted in partial fulfillment of the requirements for the award of the degree of

BACHELOR OF ENGINEERING

By

Nikita Patil: 22106081

Neha Sirsat: 22106082

Aryan Kharat: 23206001

Under the Guidance of

Prof. Sumeet Shingi

Department of Computer Science & Engineering

(Artificial Intelligence & Machine Learning)

A.P. SHAH INSTITUTE OF TECHNOLOGY, THANE

UNIVERSITY OF MUMBAI

2025-2026

A. P. SHAH INSTITUTE OF TECHNOLOGY, THANE

CERTIFICATE

This is to certify that the project entitled "Smart Waste Management Using IoT" is a bonafide work of **Nikita Patil (22106081), Neha Sirsat (22106082), Aryan Kharat (23206001)** submitted to the University of Mumbai in partial fulfilment of the requirement for the award of the degree of **Bachelor of Engineering** in **Computer Science & Engineering (Artificial Intelligence & Machine Learning**).

Prof. Sumeet Shingi	Prof. Sayali Badhan
Guide	Project Co-ordinator
Dr. Jaya Gupta	Dr. Uttam Kolekar
Head of Department	Principal

A. P. SHAH INSTITUTE OF TECHNOLOGY, THANE

Project Report Approval for B.E.

This project report entitled ***Smart Waste Management Using IoT*** by ***Nikita Patil, Neha Sirsat, Aryan Kharat*** is approved for the degree of ***Bachelor of Engineering*** in ***Computer Science & Engineering (Artificial Intelligence & Machine Learning)***, ***2025-26***.

Examiner Name	Signature
1._____	_____
2._____	_____

Date:

Place:

Declaration

We declare that this written submission represents my ideas in my own words and where others' ideas or words have been included, I have adequately cited and referenced the original sources. I also declare that I have adhered to all principles of academic honesty and integrity and have not misrepresented or fabricated or falsified any idea/data/fact/source in my submission. I understand that any violation of the above will be cause for disciplinary action by the Institute and can also evoke penal action from the sources which have thus not been properly cited or from whom proper permission has not been taken when needed.

Nikita Patil (22106081)

Neha Sirsat (22106082)

Aryan Kharat (23206001)

Date:

Abstract

This project introduces an IoT-Based Smart Waste Management System designed to modernize traditional municipal waste collection through automation, data analytics, and smart infrastructure. The system employs ultrasonic sensors to monitor bin fill levels and flame sensors to detect fire hazards, with real-time data transmission to a cloud-based database via IoT protocols. A role-based web application provides dedicated dashboards for municipal officials, citizens, and drivers—enabling users to monitor bin status, report issues, and optimize collection routes. Developed using Node.js, Express.js, and MongoDB Atlas, with JWT authentication for secure access, the platform ensures scalability and reliability, while deployment on Vercel with CI/CD pipelines supports continuous integration and seamless updates. By integrating IoT sensors, cloud technologies, and a user-friendly interface, the system minimizes manual monitoring, reduces operational costs, and promotes cleaner, safer urban environments. Aligning with the United Nations Sustainable Development Goals, it supports SDG 3 (Good Health and Well-being) by fostering hygienic conditions, SDG 9 (Industry, Innovation, and Infrastructure) through technological advancement, SDG 11 (Sustainable Cities and Communities) by promoting smart and resilient cities, and SDG 16 (Peace, Justice, and Strong Institutions) by encouraging transparent and data-driven governance—making it a step toward sustainable, efficient, and intelligent waste management for smarter cities.

Keywords: IoT, Smart Waste Management, Ultrasonic Sensor, Flame Detection, Realtime Monitoring, Node.js, MongoDB Atlas, Web Application, Role-based Access, JWT Authentication, Vercel Deployment, CI/CD, Urban Sustainability, Smart City, Cloud Computing.

Contents

1. Introduction.....1

1.1 Background.....1

1.2 System Overview.....2

1.3 Overview of the Tech Stack (Node.js, Express, MongoDB) 3

2. Survey/ Existing System 4

3. Limitation of Existing System 10

4. Problem Statement and Objective 12

4.1 Problem Statement 12

4.2 Objective 13

4.3 Scope 14

5. Proposed System 15

6. Experimental Setup 21

7. Results and Discussion 24

8. Conclusion and Future Work 44

8.1 Conclusion 44

8.2 Future Scope 45

References.....46

Appendix..... 48

Publication 49

Acknowledgements…… 77

LIST OF FIGURES

Figure 5.1: Proposed System Architecture 12
Figure 5.2: Data Flow Diagram 14
Figure 5.3: Use Case Diagram 15
Figure 5.4: Sequence Diagram 16
Figure 5.5: Activity Diagram 17
Figure 7.1: Physical IoT Edge Node Setup 27
Figure 7.2: Unified Role-Based Login Interface 29
Figure 7.3: Municipal Authority Dashboard 30
Figure 7.4: Real-Time Hazard Alerts 33

LIST OF TABLES

Table 2.1: Research Gap 10
Table 7.1: Performance Analysis 3

ABBREVAION

DSA	*Data Structures and Algorihtms*
IDE	*Integrated Developmet Environment*
JSAV	*JavaScript Algorihtm Visulaization*
JHAVE	*Java Hosted Algorithm Visualization Environment*
JAWAA	*Java and Web-based Algorithm Animation*
BFS	*Breadth First Search*
DFS	*Depth First Search*

Chapter 1

Introduction

1.Introduction

Solid waste management has emerged as one of the most critical and resource-intensive logistical operations for every modern city across the globe. Managing solid waste has become a serious challenge for modern society. This is mainly due to rapid urbanization, industrial growth, and the fast-growing population in both cities and rural areas. With changing consumption patterns, the sheer volume of municipal solid waste generated daily has reached unprecedented levels, putting immense pressure on local municipalities. Managing this vast amount of waste efficiently is a primary responsibility of municipal corporations.

However, most municipalities still rely on outdated, manual methods for waste collection. The old ways of managing waste rely on checking bins manually and collecting garbage on fixed schedules. Currently, municipal authorities use traditional methods where garbage trucks follow strict routes every day, regardless of whether the bins are full or empty. This approach wastes a lot of time, labor, and fuel. It also increases operational costs and carbon emissions. These methods are becoming inefficient, often resulting in overflowing bins, environmental pollution, and serious risks to public health.

To solve the need for a better and sustainable solution, this project introduces an IoT-Based Smart Waste Management System. This system changes the traditional infrastructure into an intelligent, automated network. By connecting physical garbage bins to a centralized digital

network, the entire waste management ecosystem transitions from a "schedule-based" model to a highly optimized "data-driven" model.

1.1 Need for the Application

The primary motivation behind developing the IoT Waste Management System stems from observing the daily logistical failures of municipal corporations. Since there is no real-time visibility, authorities do not know when a bin is full. As a result, bins often overflow in busy areas, causing environmental pollution, bad odors, and serious health risks for the public. Furthermore, the traditional system has no safety features; for example, if a fire breaks out inside a bin due to waste heat, there is no way to detect it immediately.

The necessity for this application can be categorized into three major domains:

- **Economic Need:** Municipalities spend a massive portion of their budget on the fuel, maintenance, and labor required for garbage truck fleets. By providing real-time data, authorities can optimize truck routes, directing them only to bins that have crossed a specific fill threshold.
- **Environmental Need:** Unnecessary trips by heavy diesel garbage trucks contribute significantly to urban air pollution. Route optimization directly reduces the carbon footprint. Additionally, preventing bin overflows stops hazardous waste from spilling into the streets.
- **Social and Administrative Need:** Citizens demand clean neighborhoods. Our application bridges the communication gap by providing a dedicated portal for grievance redressal, while giving drivers a clear, digital itinerary of bins that require immediate clearance. Our system uses Role-Based Access Control (RBAC) to provide specific dashboards for different users. Municipal Officers can plan schedules based on real-time data, Drivers can follow better routes, and Citizens can report local issues.

1.2 What what is IoT and Smart Waste Management?

The advent of the Internet of Things (IoT) has sparked a revolution in urban planning, giving rise to the concept of "Smart Cities." By using the Internet of Things (IoT), we created a "smart

city" environment where devices can exchange data without needing human help. IoT refers to a network of physical objects embedded with microcontrollers, sensors, software, and communication technologies that connect and exchange data over the internet.

By integrating IoT into waste management, we attach smart sensors to traditional bins, transforming them into intelligent data nodes. We used ESP32 microcontrollers connected to ultrasonic sensors to monitor how full the bins are, and flame sensors to detect fire hazards. This telemetry is transmitted over Wi-Fi to a cloud server, enabling automated decision-making and allowing authorities to take immediate, targeted action without manual inspection.

1.3 Overview of the Technology Stack

Unlike traditional desktop-bound software, this project utilizes a modern, highly scalable, and lightweight full-stack web architecture to ensure seamless data flow from the hardware sensors to the end-user's screen.

- **Backend Infrastructure (Node.js & Express.js):** The backend is engineered using Node.js, providing a non-blocking, event-driven runtime environment ideal for handling concurrent IoT API calls. This is powered by a Node.js and Express.js backend, along with a responsive frontend interface.

- **Database Management (MongoDB Atlas):** A cloud-based NoSQL database, MongoDB Atlas, is the backbone of our data storage. We utilized MongoDB Atlas for scalable data storage and Vercel to handle continuous updates and deployment. It efficiently stores user profiles and massive logs of time-series sensor data.

- **Security and Access Control:** Security is a paramount concern. To keep the system secure, we implemented JSON Web Tokens (JWT) for encrypted authentication, which stops unauthorized access to sensitive data.

- **Frontend Interface (HTML5, CSS3, Vanilla JS):** To ensure the application loads instantly even on mobile networks for drivers, the frontend avoids heavy rendering libraries. The interface dynamically updates the real-time status of the bins without requiring manual page refreshes, effectively functioning as a digital twin of the physical infrastructure.

Chapter2

Literature Survey/Existing System

2. Literature Survey/Existing System

[1] IoT Based Smart Garbage and Waste Collection Bin (2016)

This foundational research by Navghane, S. S., Killedar, M. S., and Rohokale, V. M. demonstrates the initial paradigm shift from manual garbage collection to automated monitoring. The authors proposed a system utilizing basic microcontrollers paired with ultrasonic sensors to measure the vertical depth of garbage inside municipal bins. By constantly emitting ultrasonic waves, the system successfully calculated the empty space and triggered an alert when the bin reached its maximum capacity. Their experimental results conclusively proved that utilizing hardware sensors is far more efficient than the traditional manual checking method, thereby reducing human effort. However, these early implementations primarily focused only on the hardware and sensor layers. The major limitation of this system is its reliance on basic GSM modules for SMS alerts and the complete lack of a centralized cloud database. It functions merely as a standalone hardware prototype, completely lacking the interactive web dashboards, data logging, and scalability required for a comprehensive, city-wide municipal deployment.

[2] Challenges and Opportunities of Waste Management in Smart Cities (2017)

In this comprehensive study, Anagnostopoulos et al. explored the broader, city-wide implications of deploying IoT infrastructure for solid waste management. The research highlighted the severe logistical challenges associated with scaling IoT networks across a metropolis. The authors theoretically demonstrated that while attaching sensors to bins is straightforward, transmitting, processing, and storing the continuous influx of telemetry data from thousands of bins can easily overwhelm traditional server architectures. The research emphasizes that managing this big data requires highly specialized cloud handling and routing algorithms. The primary research gap identified in this survey is that it remained highly theoretical. While the study effectively highlighted core data processing challenges and the need for robust backend systems, it lacked a unified, practical implementation. It did not offer a working prototype that successfully combines highly scalable NoSQL cloud databases (like MongoDB) into a single, functional web platform for end-users.

[3] IoT-WMS: Design and Implementation of an IoT-based Smart Waste Management System (2024)

In a more recent and advanced study, Borojeni, G. P., and Abdi, A. designed an architecture known as IoT-WMS. This system utilizes modern ultrasonic sensors to determine bin capacity and focuses heavily on seamlessly streamlining the routing process for garbage collection vehicles. By processing the fill-level data, the system attempts to dynamically guide trucks to only the bins that require immediate clearing, thereby saving municipal fuel and reducing carbon emissions. While the system effectively links physical bins to algorithmic collection schedules, a critical evaluation reveals a significant missing component: data security and strict user access management. Similar to many existing systems, this project does not control who can access or modify the municipal data. It completely lacks a Role-Based Access Control (RBAC) mechanism. Our proposed project directly resolves this major security gap by incorporating encrypted JSON Web Tokens (JWT) to securely segregate dashboards for Authorities, Drivers, and Citizens.

[4] A Smart Waste Management System Framework Using IoT and LoRa for Green City Project (2023)

Laha, S. R., et al. proposed an innovative framework combining traditional IoT setups with LoRaWAN (Long Range Wide Area Network) technology. The primary objective of this research was to address the long-range communication challenges often faced in sprawling green city projects where standard Wi-Fi is unavailable. LoRaWAN allows the edge nodes to 5 transmit small payloads over several kilometers with exceptionally low power consumption, making the bins highly energy-efficient. While this study provides an excellent, robust hardware connectivity solution for vast geographical areas, its limitations lie heavily in the software application layer. The system often lacks dedicated, separate, and interactive web interfaces for different municipal stakeholders. For instance, it does not provide a specific, user-friendly portal for citizens to report local grievances, nor does it offer a distinct, secure dashboard for drivers, which severely restricts administrative transparency and public involvement.

[5] A Proposed IoT-Enabled Smart Waste Bin Management System and Efficient Route Selection (2023)

Alowayr, A. S. focused heavily on the logistical and transportation aspects of municipal waste management. The research emphasized that simply deploying IoT-enabled smart bins is insufficient unless it is paired with dynamic route selection algorithms. The study demonstrated that by utilizing optimized routing mathematics (like the Traveling Salesperson Problem algorithms), municipalities can significantly reduce operational fuel costs, minimize vehicle wear-and-tear, and drastically lower environmental greenhouse gas emissions. While the routing algorithms presented are highly efficient and mathematically sound, the system's underlying data storage relies on traditional, rigid relational databases. Furthermore, the physical bins only measured waste volume, entirely neglecting the detection of physical hazards like spontaneous fires. By integrating a modern full-stack web architecture alongside IR flame sensors for hazard detection, our project bridges the gap between basic route optimization and comprehensive municipal safety.

[6] Solid Waste Management Architecture Using Wireless Sensor Networks (2012)

Longhi, S., et al. proposed a very early, pioneering model for solid waste management utilizing Wireless Sensor Networks (WSN). In this architecture, individual garbage bins act as interconnected communication nodes that pass data to one another in a mesh topology until the data reaches a central municipal gateway. While highly innovative for its time and effective in localized areas, the major limitation is the high power consumption required to maintain constant mesh routing. Additionally, the communication range of these early WSN nodes was severely limited. Today, this technology is largely outdated compared to the direct-to-cloud capabilities of modern microcontrollers like the ESP32. Furthermore, this historical system completely lacked any form of hazard detection, such as identifying potential fires inside dry waste bins, making it unsafe for modern urban deployment.

[7] Smart Waste Management System Using IoT (2018)

This paper by Kumar, S., and Jain, P. examines the effectiveness of IoT-based automation in municipal environments using highly accessible components like basic Arduino boards integrated with GSM (Global System for Mobile Communications) modules. The system utilized these cellular modules to send direct SMS text alerts to municipal cleaning staff the moment a bin's ultrasonic sensor detected a fill level exceeding 80%. While this provided an immediate notification mechanism, the limitation of this study is its heavy reliance on cellular SMS for continuous alerts. This approach incurs a recurring per-message financial cost for the municipality and completely fails to provide a continuous, real-time graphical visualization of the bin's status. Without a centralized web portal, authorities cannot perform long-term analytics or view the historical data of waste generation trends.

[8] IoT Based Smart Garbage Monitoring System (2017)

Patel, M., Doshi, J., and Vala, J. developed a sophisticated, multi-sensor system aimed at improving the overall accuracy of waste measurement. Unlike standard projects that solely rely on ultrasonic sensors to measure volume, this system additionally utilized load cells (weight sensors) placed at the base of the bin. This dual-sensor approach allowed authorities to measure both the physical mass and the vertical volume of the garbage simultaneously. While this significantly improved data accuracy, it drastically increased the hardware

complexity, physical wear-and-tear on the weight sensors, and overall maintenance costs. Additionally, the software backend utilized a localized server rather than a globally scalable cloud-based NoSQL database, making city-wide deployment and remote accessibility incredibly difficult to achieve and maintain.

[9] Internet of Things: A Survey on Enabling Technologies, Protocols, and Applications (2015)

Al-Fuqaha, M., et al. provided a massive, comprehensive review of the underlying networking protocols required for IoT devices to function effectively on a global scale. This paper meticulously analyzed various communication standards, specifically discussing the differences between lightweight MQTT protocols and standard HTTP REST APIs. This survey was instrumental in laying the theoretical groundwork for understanding how low-power edge devices should communicate with cloud servers. However, the distinct research gap is that the paper is purely theoretical and educational. It does not offer a specific, 7 tailored application architecture for solid waste management. It discusses protocols but lacks the practical implementation of user authentication, continuous sensor data logging, and front-end visualization needed for a smart bin project.

[10] Smart Waste Revolution: AI-Powered Biomedical Segregation and Recycling (2024)

Uthayakumar, G., et al. explored the highly advanced integration of Artificial Intelligence (AI) and IoT sensors to achieve automated waste segregation. This project specifically focused on the critical domain of biomedical waste. The system utilizes edge computing and computer vision algorithms (via camera modules) to visually identify different waste types and automatically segregate them into distinct compartments. While technologically spectacular, the computational power required for AI image processing at the edge consumes massive amounts of electricity and is extremely expensive to manufacture. The primary limitation for general municipal use is the prohibitive cost of deployment per bin, making AI-driven segregation unfeasible for street-level municipal garbage collection in developing cities.

[11] Internet of Things for Smart Cities (2014)

Zanella, A., et al. presented a foundational paper outlining the broad vision and architectural frameworks required to transition a traditional urban space into a "Smart City". The paper discusses various IoT applications, ranging from smart street lighting and traffic management to general environmental monitoring. It provides a strong justification for why municipal corporations must invest in digital infrastructure. However, the identified gap is that while the study focuses heavily on theoretical smart city models and broad urban planning, it lacks a deep dive into the practical integration of specific hazard sensors. For instance, it highlights general environmental monitoring but does not detail the urgent necessity of integrating fire/flame detection alongside volumetric fill levels in highly combustible dry waste bins.

[12] The Internet of Things: A Survey (2010)

Atzori, L., et al. published one of the earliest and most highly cited surveys defining the foundational architecture of the Internet of Things. The paper traces the evolution of IoT from basic RFID (Radio Frequency Identification) tags used in supply chains to the deployment of Wireless Sensor Networks (WSNs). While this paper provides an excellent historical context for IoT development, its technological methodologies are significantly outdated compared to modern cloud-native architectures. The research highlights the evolution needed towards RESTful APIs and flexible NoSQL databases, which our current project successfully 8 implements. This historical paper serves to show how far IoT has progressed from simple RFID tracking to complex, real-time Node.js web applications.

[13] Architectural Styles and the Design of Network-based Software Architectures (2000)

This Ph.D. dissertation by Roy T. Fielding is the seminal work that introduced the Representational State Transfer (REST) architectural style. RESTful APIs have become the absolute global standard for modern web and IoT backend communication. Understanding this architecture is essential for ensuring that our ESP32 microcontrollers can seamlessly communicate with our Node.js server using standard HTTP POST and GET methods. The gap here is that this is a foundational software engineering paper, not a waste management study.

It outlines the rules for software architecture but does not discuss hardware integration, sensor telemetry, or role-based dashboards. Our project bridges this theoretical software engineering concept with practical municipal hardware application.

[14] A Smart Waste Management System Using ESP8266 (2024)

Gurupriya, M., and Yadav, K. conducted a highly practical study demonstrating the cost-effectiveness and reliability of utilizing ESP8266 microcontrollers for real-time municipal monitoring. The research proved that low-cost Wi-Fi modules could successfully achieve continuous cloud synchronization without the need for expensive industrial gateways. The system proved that scalable IoT deployments are financially viable for developing nations. However, despite the excellent hardware implementation, the software ecosystem remained severely limited. The system lacked separate, dedicated web interfaces secured by modern encryption. It did not provide isolated environments for Citizens to report issues, nor did it offer a secure, role-restricted dashboard for Administrative Officers, thereby limiting its usability as a complete administrative tool.

[15] Node.js: Using JavaScript to Build High-Performance Network Programs (2010)

Tilkov, S., and Vinoski, S. explored the revolutionary architecture of Node.js. Traditional web servers create a heavy, new processing thread for every single incoming request, which can quickly crash a server when thousands of IoT bins send data simultaneously. This paper highlights the asynchronous, single-threaded, and event-driven nature of Node.js, proving why it is the perfect backend environment for handling massive amounts of concurrent, lightweight IoT pings. The limitation is that this research focuses purely on backend software performance metrics. Our "IoT Waste Management System" implements these 9 high-performance backend principles specifically to manage hardware sensor telemetry, coupled with MongoDB and secured by JWT authentication for a complete smart city solution.

Table 2.1: Research Gap

Research Paper	Year	Algorithm Used	Gap
Algorithm Visualization on Data Structures Along with AI Chatbot	2025	Sorting, Searching	Web-based, no offline capability, and no modular expansion
Demystifying Complex Algorithms: A Visual Guide Through the DSA Visualize	2024	Advanced Algorihtms	Web-only; no mobile/offline features.
Application of Algorithm Visualization Techniques in Teaching Computer Data Structure Course	2024	Data Structures and Algorithms	Instruction geared more toward desktops; lacks mobile or offline access.
The Efficacy of Animation and Visualization in Teaching Data Structures	2024	Sorting, Recursion, Graphs	Limited coverage of algorithms; no offline support.
Visualizing Algorithms in the Field of Education: A Comprehensive Review	2023	Sorting, Tress, Graphs	Survey only; no practical implementation
Research on Graphic Interactive Visual Online Teaching of Intelligent Algorithm Course	2023	Intelligent Algorithms and DS	Requires online connectivity; not focused on mobile or offline use.
Evaluating Software Algorithm Visualization Projects	2023	General Algorithm Visualization	Focuses only on evaluation; lacks mobile-based and offline implementation.
Research and Application of Animation Visualization Based on HTML5 Algorithm	2023	General Algorithm Animation	Uses only web technologies; it does not have a mobile or modular extension.

Algorithm Visualisation Modern Web-Based Visualization of Sorting and Searching Algorithms	2022	General Algorithm Animation	Limited to internet access alone; not mobile or offline compatible.
Algovis-An Enhanced Way to Visualize Algorithms	2022	Sorting, Searching	Focuses on improvement without a modular approach in mobile design.
Developing Android Mobile Application Using Java and Eclipse: An Application	2017	Android activity lifecycle & event-driven programming	Lack of practical, step-by-step, and scholarly guidelines for beginners.
Creating Engaging Online Learning Material with the JSAV Algorithm Visualization Library	2015	General Algorithms	Web-based library; requires setup and lacks standalone mobile/offline use.
Teaching Sorting and Searching Algorithms Through Simulation-Based Learning	2014	Sorting, Searching	Simulation limited to desktop learning; no mobile or offline support.
JHAVÉ: Supporting Algorithm Visualization	2005	General Algorithm Visualization	Framework-based approach; lacks portability and real-time interactivity.
Web-Based Animation of Data Structures Using JAWAA	1998	Data Structures (Arrays, Stacks, Queues)	Web-based and outdated;lacks modern UI and mobile compatibility

Chapter 3

Limitation of Existing System

3. Limitation of Existing System

1. Manual and Static Collection Model

- Currently, the municipal waste management system operates on a manual and static model.
- Garbage collection trucks follow a fixed, pre-decided route every day, regardless of whether the dustbins are full or empty.
- This creates a major efficiency problem where trucks often visit empty bins, leading to a huge waste of fuel, labor, and valuable time.

2. Lack of Real-Time Visibility

- Since there is no real-time visibility, authorities do not know when a bin is full.
- Bins often overflow in busy areas before the next scheduled collection, causing environmental pollution and bad odors.
- The absence of remote monitoring leads to serious health risks for the public due to unsanitary conditions.

3. Absence of Hazard and Fire Detection.

- Traditional waste management systems have no safety features to monitor the physical state of the waste.
- If a fire breaks out inside a bin due to waste heat or dry materials, there is no way to detect it immediately.
- This lack of emergency alerting can lead to significant damage to public property before manual intervention is possible.

4. Network and Environmental Dependencies

- Many proposed IoT systems rely heavily on a stable internet connection; if the network is weak, microcontrollers cannot transmit data to the cloud.
- Hardware components like ultrasonic and flame sensors are sensitive to environmental factors such as dust, moisture, or heavy rain.
- These environmental impacts can affect sensor accuracy over time, requiring regular physical maintenance and investment.

5. Security and Data Access Vulnerabilities

- A major missing piece in many existing systems is a lack of strict security and access control.
- Most projects do not strictly control who can access or view the sensitive municipal data.
- Without secure authentication like JSON Web Tokens (JWT), the data remains vulnerable to unauthorized access.

6. High Operational Cost and Carbon Footprint

- Unoptimized operations increase the overall operational cost for the city due to wasted resources.
- Static routes increase the carbon footprint of the municipal fleet, making current methods unsustainable for modern cities.
- The current version of traditional systems does not support automatic waste segregation, requiring more manual effort for recycling.

7. Lack of Grievance Redressal Mechanism

- In the existing system, there is no dedicated digital portal for citizens to report uncollected waste or overflowing bins.
- This creates a communication gap between the public and the municipal administration, leading to poor urban hygiene.
- Without a transparent feedback loop, authorities cannot track the performance of garbage collection in specific wards or areas.

8. Absence of Historical Data for Predictive Planning

- The current manual process does not log any data regarding daily waste generation patterns.
- Because there is no record-keeping of when and where bins fill up fastest, authorities cannot perform long-term analytics.
- This lack of historical telemetry makes it impossible to implement predictive scheduling or future infrastructure planning.

9. Inefficient Resource and Labor Allocation

- Since trucks visit bins blindly, there is a severe misallocation of human resources and vehicle wear-and-tear.
- Laborers often spend hours traveling to locations where collection is not even required.
- This unoptimized use of manpower increases the overall operational budget of the municipal corporation without improving service quality.

10. Latency and Data Synchronization Issues

- Many early-stage IoT attempts suffefrom high data transmission latency between the sensor and the server.
- In areas with fluctuating network signals, data packets are often lost, leading to inaccurate bin status on the dashboard.
- The existing systems often fail to re-establish connectivity automatically after a network outage, causing a permanent loss of real-time logs.

11. High Maintenance and Calibration Requirements

- Hardware components like the HC-SR04 ultrasonic sensor require precise mounting and frequent cleaning to maintain accuracy.
- Environmental factors like high humidity or dust can cause anomalous data spikes, leading to false "Full Bin" alerts.
- Traditional models do not have built-in algorithmic filters to smooth out these sensor errors, resulting in unreliable data.

12. Limited Integration with Navigation Systems

- Current systems may show that a bin is full, but they do not provide live GPS-guided navigation to the driver.
- Drivers still have to manually decide the best path to reach multiple full bins, which might not be the most fuel-efficient route. The absence of an integrated mapping solution limits the full automation of the waste collection lifecycle.

Chapter 4

Problem Statement and Objective

4. Problem Statement and Objective

4.1 Problem Statement

Learning The management of municipal solid waste has emerged as one of the most critical and resource-intensive logistical challenges for modern urban environments. As cities grow rapidly due to urbanization and industrialization, the traditional methods used for garbage collection are proving to be increasingly unsustainable. Currently, waste management relies on a manual and static model where collection trucks follow pre-decided, fixed routes every day, regardless of whether the bins are full or empty. This lack of real-time visibility leads to a massive inefficiency where trucks often visit empty bins, causing a significant waste of fuel, labor, and valuable time, while simultaneously increasing the city's carbon footprint. On the other hand, in high-traffic or densely populated areas, bins frequently overflow long before the next scheduled pickup. These overflowing bins create highly unsanitary conditions, emit foul odors, and pose serious public health risks by attracting disease-carrying vectors. Furthermore, traditional waste containers are passive and lack any form of emergency hazard 16 monitoring; for instance, if a fire breaks out inside a bin due to waste heat or flammable materials, there is

no mechanism to detect it immediately, leading to potential property damage. There is also a significant communication gap between the public and authorities, as citizens lack a transparent platform to report uncollected waste. Therefore, there is an urgent need for an integrated IoT-based Smart Waste Management System that provides real-time telemetry on bin fill levels and fire risks, enabling data-driven route optimization and enhanced public safety.

4.2 Objectives

- To develop a real-time smart waste monitoring system: The primary objective is to build a comprehensive end-to-end system that utilizes IoT sensors to track the live status of garbage bins, allowing municipal authorities to observe urban waste levels from a centralized digital dashboard.
- To accurately measure bin fill levels and detect fire hazards: The system aims to utilize HC-SR04 ultrasonic sensors to calculate waste volume into percentage-based data and integrate flame sensors to monitor infrared emissions, ensuring immediate alerts for potential fire accidents.
- To provide real-time data visualization and analytics: The project objective includes developing a responsive frontend dashboard on Vercel that converts raw sensor telemetry into easy-to-read graphical logs and tables for municipal decision-making.
- To integrate environmental hazard filtering algorithms: The system aims to incorporate software-based filters to discard anomalous data spikes caused by uneven waste surfaces, ensuring the reliability and accuracy of the reported fill-level percentages.
- To facilitate a centralized administrative control hub: The objective is to provide municipal officers with a unified interface to plan collection schedules and monitor the operational status of the entire waste bin network from a single location.
- To develop a secure stateless authentication framework: By integrating JSON Web Tokens (JWT), the system ensures that every API request from the hardware to the server is encrypted and authenticated, mitigating the risk of unauthorized data manipulation.
- To implement an edge-computing gateway for telemetry: project utilizes the dual-core processing capabilities of the ESP32 microcontroller to poll and process sensor data at the source before transmitting it via a secured Wi-Fi network.
- To provide real-time data visualization and analytics: The project objective includes developing a responsive frontend dashboard on Vercel that converts raw sensor

telemetry into easy-to-read graphical logs and tables for municipal decision-making.

- To develop a secure stateless authentication framework: By integrating JSON Web Tokens (JWT), the system ensures that every API request from the hardware to the server is encrypted and authenticated, mitigating the risk of unauthorized data manipulation.

4.3 Scope

The scope of this project encompasses the end-to-end development of an intelligent urban waste management ecosystem, integrating advanced hardware sensing with modern cloud-based software architecture. Primarily, the project involves the design and calibration of a physical sensor node powered by an ESP32 microcontroller, which is responsible for the real-time polling of volumetric waste data via HC-SR04 ultrasonic sensors and emergency hazard monitoring through IR flame sensors. This hardware layer acts as the perception unit of the system, ensuring that raw environmental telemetry is accurately captured and processed before transmission. Furthermore, the scope extends to the engineering of a high-performance backend infrastructure using Node.js and Express.js, specifically designed to handle concurrent RESTful API requests from multiple IoT nodes across a simulated municipal area. A significant portion of the project's scope is dedicated to data persistence and security, utilizing a MongoDB Atlas cloud database for long-term storage of sensor logs and implementing JSON Web Tokens (JWT) to establish a secure, stateless authentication framework. This ensures that sensitive municipal data is protected from unauthorized access while maintaining high-speed data retrieval for administrative analytics. 18 Additionally, the project includes the creation of three distinct, responsive web-based dashboards hosted on the Vercel platform, tailored to the specific needs of Municipal Officers, Drivers, and Citizens. While the current version focuses on fill-level monitoring and fire detection, the architecture is designed with future scalability in mind. The extended scope for future development includes the potential integration of live GPS navigation systems for automated truck routing, the implementation of AI-driven waste segregation mechanisms at the source, and the development of a dedicated mobile application to enhance user accessibility for stakeholders on the go.

Chapter 5

Proposed System

5.1 Proposed System

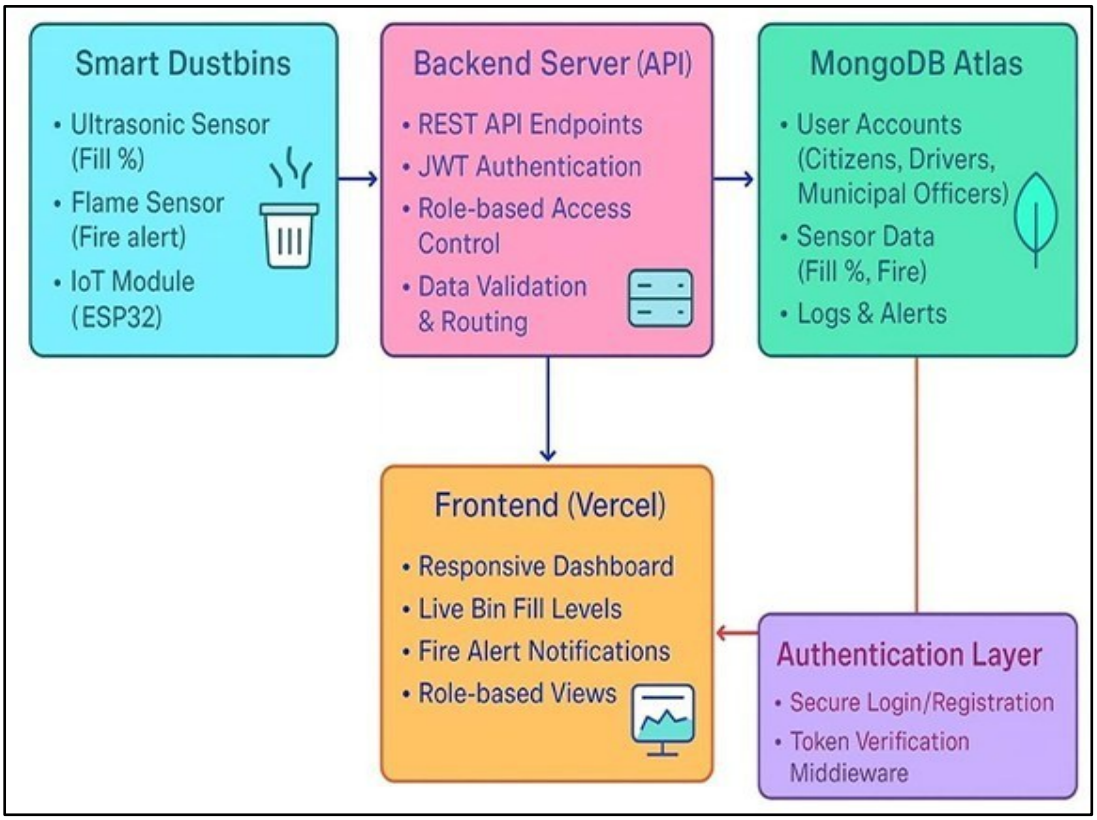

Figure 5.1 Architecture Diagram

5.1.1 Hardware & IoT Layer: Smart Dustbins

This is the data acquisition layer of the system where physical parameters are converted into digital data.

- **IoT Module (ESP32):** The core microcontroller used here is the ESP32. It acts as the "brain" of the smart dustbin. It is highly preferred for IoT projects because it has built-in Wi-Fi and Bluetooth capabilities, low power consumption, and enough processing power to handle multiple sensors simultaneously. It collects raw data from the attached sensors and transmits it over the internet to the backend server.
- **Ultrasonic Sensor (Fill %):** This sensor measures the exact garbage level inside the bin. It works by emitting high-frequency sound waves and calculating the time it takes for the echo to bounce back from the surface of the garbage. By knowing the total depth of the empty bin, the microcontroller calculates the percentage of the bin that is filled. This prevents overflow and optimizes waste collection routes.
- **Flame Sensor (Fire Alert):** Waste bins are susceptible to catching fire (e.g., from unextinguished cigarettes or chemical reactions). The flame sensor detects the infrared wavelengths emitted by a fire. The moment a fire is detected, it triggers an emergency interrupt in the ESP32, which immediately dispatches a high-priority alert to the server.

5.1.2 Backend Server (API Layer)

The backend acts as the central bridge between the hardware, the database, and the user interface. It processes incoming data and enforces business logic.

- **REST API Endpoints:** The system uses Representational State Transfer (REST) architecture. The ESP32 sends HTTP POST requests to specific endpoints to upload data. Similarly, the frontend applications make GET requests to fetch the latest bin statuses.
- **Data Validation & Routing:** Before saving any data to the database, the backend validates it. For example, it ensures the "fill percentage" is between 0 and 100. If malicious or corrupted data is sent, the server rejects it. Once validated, the server routes the data to the appropriate database collections.
- **JWT Authentication:** JSON Web Tokens (JWT) are used for stateless and secure user authentication. When a user logs in, the server generates a token containing their

encrypted identity. This token is sent with every subsequent request, ensuring that the server knows exactly who is asking for data without needing to store active session data.

- **Role-Based Access Control (RBAC):** This is a critical security feature. The backend ensures that users only access data meant for them.

5.1.3 Database Layer: MongoDB Atlas

The system uses MongoDB Atlas, a fully managed, cloud-based NoSQL database. NoSQL is highly suitable for IoT applications because sensor data is easily represented as JSON documents, allowing for fast, flexible, and scalable storage.

- User Accounts Collection: This stores the credentials and profiles of the system users. It is divided into distinct roles:
- Citizens: Can view the location of nearby bins and complain about overflowing bins.
- Drivers: Can view optimized collection routes and assigned bins
- Municipal Officers: Have administrative access to view overall city-wide statistics, reports, and manage staff.

Sensor Data Collection:

This acts as a time-series database. Every time the ESP32 sends a ping, a new document is created containing the timestamp, Bin ID, Fill Percentage, and Fire Status. This historical data can later be used for predictive analytics and machine learning.

Logs & Alerts Collection:

Stores a permanent record of all critical events, such as when a bin reached 100% capacity, when a fire was detected, or when a bin was successfully emptied by a driver.

5.1.4 Security & Authentication Layer

This acts as a protective shield for the frontend UI and the backend APIs.

Secure Login/Registration: Handles the encryption of user passwords (usually using algorithms like bcrypt) before storing them in the database.

5.1.5 Frontend Presentation Layer (Hosted on Vercel)

This is the user interface where data is visualized. Hosting on Vercel ensures the application is fast, globally distributed, and offers continuous deployment.

- **Responsive Dashboard:** The UI is designed to be fully responsive, meaning it adapts seamlessly to desktop monitors for municipal officers, and mobile screens for garbage collection drivers out in the field.
- **Live Bin Fill Levels:** The dashboard fetches data from the backend to display real-time statistics. This can be visualized using progress bars, pie charts, or interactive maps showing "Red" for full bins and "Green" for empty ones.
- **Fire Alert Notifications:** If a fire is detected, the frontend receives a trigger and instantly pushes a visual and audio notification to the dashboard, ensuring rapid emergency response.
- **Role-Based Views:** Tied to the backend RBAC, the frontend dynamically changes its layout based on who is logged in. A driver's screen will focus on navigation and task completion, while an admin's screen will focus on analytical graphs and system health.

5.2 Use Case Diagram:

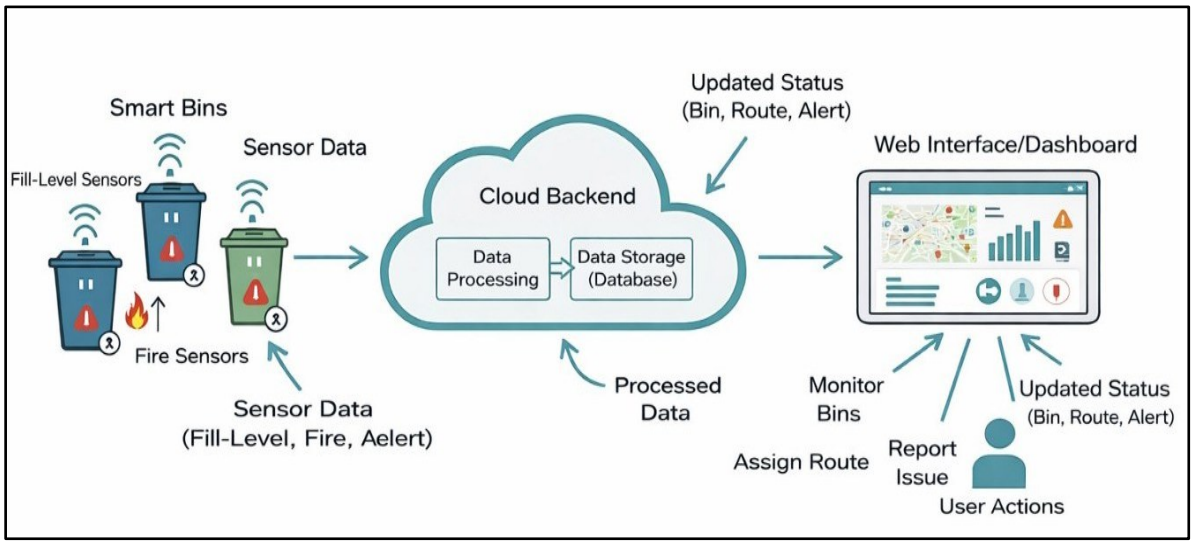

Figure 5.3 Use Case Diagram

5.2.1 Data Acquisition Layer (Smart Bins & Hardware)

This is the physical layer located at the extreme left of the diagram, responsible for interacting with the real world and gathering raw environmental data.

- **Smart Bins:** These are the physical trash receptacles deployed across various geographical locations. They are upgraded with IoT capabilities to monitor their own status.
- **Fill-Level Sensors:** Typically utilizing Ultrasonic sensors, this component continuously measures the distance from the top of the bin to the garbage surface. The embedded microcontroller (such as an ESP32) calculates the exact percentage of the bin that is filled.
- **Fire/Hazard Sensors:** A dedicated flame sensor is integrated to detect the infrared wavelengths of active fires caused by chemical reactions or discarded lit materials.
- **Wireless Data Transmission:** Once the data is acquired, the local IoT module acts as a gateway. It packages the "Sensor Data" (Fill-level, Fire alerts, and Bin ID) and transmits it securely over the internet via Wi-Fi to the central server.

5.2.2 Processing & Storage Layer (Cloud Backend)

Located in the center of the diagram, the Cloud Backend acts as the brain of the entire system. It receives continuous data streams from multiple smart bins.

- **Data Processing:** Raw data cannot be displayed directly; it must be processed. This module evaluates the incoming sensor data against predefined thresholds. For example, if a bin's fill level crosses 85%, or if a fire sensor returns a positive value, the processing engine instantly flags this as a critical event and generates an automated alert.
- **Data Storage (Database):** All incoming data is routed to a robust database (such as MongoDB Atlas). This includes real-time status updates and historical logs. Storing this data allows the system to maintain a record of collection cycles, monitor sensor health over time, and provide historical data for future predictive analysis.

5.2.3 Presentation Layer (Web Interface / Dashboard)

Located on the right side, this layer represents the frontend application (hosted on platforms like Vercel) where the processed data is visualized for human operators.

- **entralized Dashboard:** The web interface translates complex database entries into an easy-to-understand graphical format. It pulls the "Updated Status" from the cloud and displays it in real-time.
- **Visual Analytics:** The dashboard features analytical tools such as interactive maps pinpointing bin locations, bar charts showing fill percentages, and visual warning indicators (like red flashing icons) for bins that require immediate attention due to fire or overflow.

5.2.4 User Interaction Layer (User Actions)

This section outlines how different stakeholders interact with the visualized data to perform real-world tasks.

- **Monitor Bins:** Municipal authorities and system administrators use the dashboard to maintain a bird's-eye view of the city's waste infrastructure, ensuring all sensors are online and functioning.
- **Assign Route:** Once the system highlights full bins, administrators (or an automated algorithm) can assign optimized pickup routes to garbage collection drivers. This reduces fuel consumption and saves time by bypassing empty bins.
- **Report Issue / User Actions:** The system allows for manual intervention. Citizens or drivers interacting the web app can manually report issues like physically damaged bin or illegal dumping, sending this feedback loop right back into the system.

5.3 Use Case Diagram:

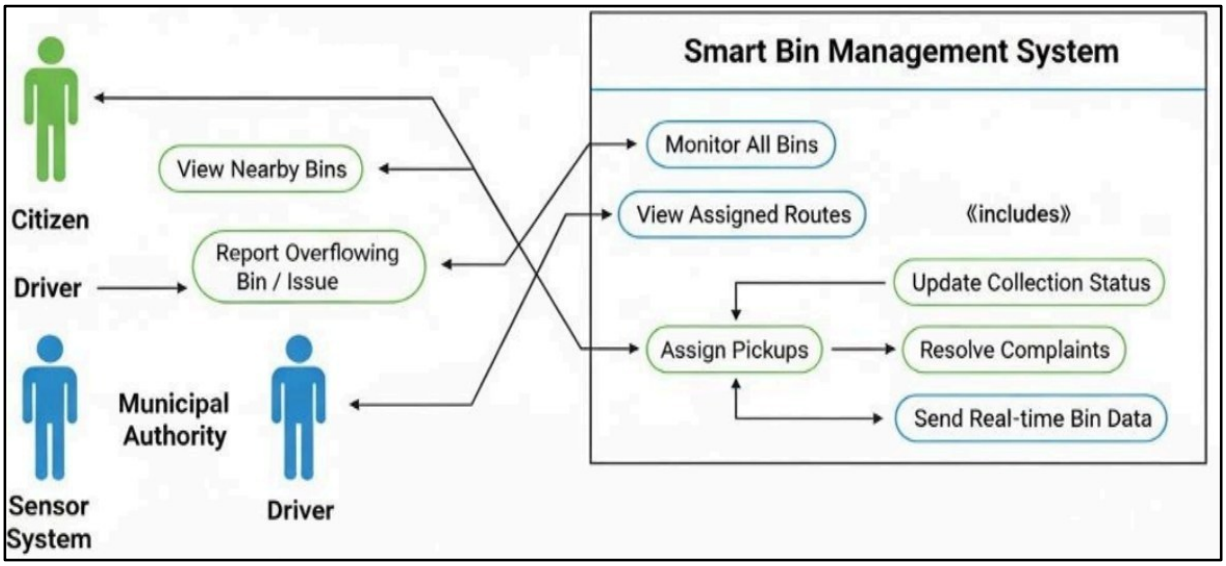

Figure 5.3 Use Case Diagram

Use Case Diagram: Smart Bin Management System

The Use Case diagram for the Smart Bin Management System provides a high-level visual representation of the system's behavioral requirements. It defines the system boundary and illustrates the various interactions between external entities (Actors) and the core functionalities (Use Cases) provided by the system. This diagram is crucial for understanding who interacts with the system and what actions they can perform, without delving into the internal technical complexities.

5.3.1 Identification of Actors

Actors represent the users or external systems that interact with our application. In this architecture, we have identified four primary actors:

- **Citizen (End User):** The general public who utilizes the smart bins to dispose of waste and helps in maintaining city cleanliness.
- Driver (Field Staff): The garbage collection personnel responsible for physically emptying the bins based on system-generated routes.
- **Municipal Authority (Administrator):** The central governing body or admin user who oversees the entire waste management operation, monitors metrics, and manages staff.
- **Sensor System (Automated Actor):** A non-human, hardware-level actor representing the IoT modules (ESP32, Ultrasonic, and Flame sensors) installed in the physical bins

5.3.2 Detailed Description of Use Cases

The system encapsulates several core functionalities, Detailed Description of Use Cases represented as use cases, which are triggered by the respective actors:

- **View Nearby Bins (Actor: Citizen)**
    - **Description**: Citizens can access the mobile or web application to locate the nearest available smart dustbins using geolocation data.
    - **Purpose**: Encourages proper waste disposal by guiding users to non-overflowing bins in their vicinity.
- **Overflowing Bin / Issue (Actors: Citizen, Driver)**
    - **Description**: Allows users on the ground to manually raise a ticket if a bin is physically damaged, overflowing (despite sensor readings), or if there is illegal dumping around the bin.
    - **Purpose**: Acts as a crowdsourced feedback loop to ensure physical verification of the bin's status.

5.3.3 Monitor All Bins (Actor: Municipal Authority)

- **Description**: The admin dashboard provides a bird's-eye view of all registered smart bins across the city. It displays real-time fill percentages, battery status of IoT modules, and active fire alerts.
- **Purpose**: Centralized surveillance and predictive maintenance of the waste infrastructure.

5.3.4 Assign Pickups (Actor: Municipal Authority)

- **Description**: Based on the data collected (bins crossing the 80% fill threshold), the admin can allocate specific collection tasks and optimized routes to available drivers.
- **Purpose**: Optimizes fuel consumption and reduces the time wasted in checking empty bins.

5.3.5 View Assigned Routes (Actor: Driver)

- **Description**: Drivers log into their specific portal to view the list of bins they need to collect for the day, along with the most efficient navigation path.

- **Update Collection Status (Actor: Driver)**
    - **Description:** Once a driver physically empties a bin, they update the task status in the app. This action synchronizes with the database to reset the bin's UI status to "Empty".
    - **Description:** The admin reviews the issues raised by citizens (e.g., damaged bins) and marks them as resolved once a maintenance crew has fixed the problem.
- **Send Real-time Bin Data (Actor: Sensor System)**
    - **Description**: This is an automated use case where the physical hardware continuously pings the cloud server with telemetry data (distance measurements for fill-level and temperature/infrared readings for fire hazards).
    - **Purpose:** Forms the backbone of the system's real-time monitoring capabilities.

5.4 Sequence Diagram

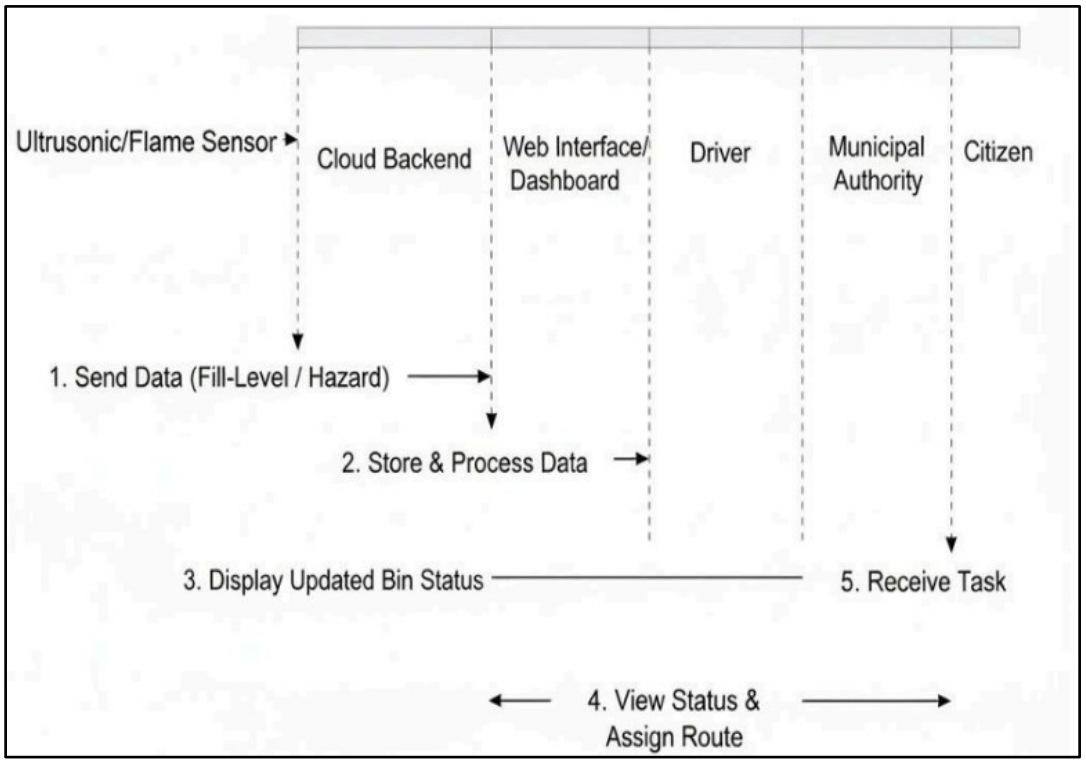

Figure 5.4 Sequence Diagram

5.4.1 Introduction to the Sequence Diagram

In the context of Unified Modeling Language (UML), a Sequence Diagram is a behavioral diagram that details how operations are carried out. It captures the interaction between objects in the context of a collaboration, specifically focusing on the chronological sequence of messages exchanged over time. For the Smart Bin Management System, this diagram illustrates the real-time, end-to-end data flow—from physical data acquisition at the bin level to administrative task assignment at the management level.

5.4.2 System Lifelines (Components and Actors)

The vertical dashed lines in the diagram are known as "Lifelines." They represent the distinct entities, hardware components, and human actors participating in the process:

- **Ultrasonic/Flame Sensor (IoT Hardware):** Represents the edge device (e.g., ESP32 microcontroller paired with sensors) installed in the physical dustbins.
- **Cloud Backend:** Represents the central processing server and database layer (e.g., RESTful APIs and MongoDB Atlas).
- **Web Interface / Dashboard**: Represents the frontend application (hosted on platforms like Vercel) providing the graphical user interface.
- **Driver:** The on-ground waste collection personnel.
- **Municipal Authority:**The system administrator overseeing city-wide waste management.
- **Citizen:** The general public interacting with the system.

5.4.3 Chronological Message Flow (Step-by-Step Execution)

The horizontal arrows represent the specific messages, API calls, or triggers passed between the lifelines. The process executes from top to bottom as follows:

Step 1: Send Data (Fill-Level / Hazard)

- **Interaction:** Ultrasonic/Flame Sensor $\rightarrow$ Cloud Backend
- **Description:** The process initiates continuously at the hardware level. The sensors measure the physical distance of the garbage (calculating fill percentage) and monitor for infrared anomalies (fire hazards). The IoT module securely transmits this raw telemetry data via Wi-Fi to the Cloud Backend using HTTP POST requests.

Step 2: Store & Process Data

- **Interaction:** Cloud Backend $\rightarrow$ Web Interface/Dashboard.
- **Description:** Upon receiving the raw data, the Cloud Backend authenticates the payload, validates the parameters, and stores the records in the database. Simultaneously, the back end's logic engine evaluates the data against predefined thresholds (e.g., Bin Fill > 80%). If a threshold is breached, the backend processes this as an event and pushes the processed data to the frontend application.

Step 3: Display Updated Bin Status

- **Interaction:** Web Interface/Dashboard $\rightarrow$ Municipal Authority / Citizen
- **Description:** The Web Interface dynamically re-renders to reflect the new data. For the Municipal Authority, a specific bin on the city map will turn red or trigger an alert. Simultaneously, Citizens using the application will see that the bin is currently marked as "Full" or "Out of Service," preventing them from attempting to use it.

Step 4: View Status & Assign Route

- **Interaction:** Municipal Authority $\rightarrow$ Web Interface/Dashboard.
- **Description:** Acting upon the real-time alerts displayed on the dashboard, the Municipal Authority interacts with the system to manage the issue. The administrator selects the full bin and uses the system's routing module to assign a collection task to an available garbage truck driver.

Step 5: Receive Task

- **Interaction:** Web Interface/Dashboard $\rightarrow$ Driver
- **Description:** Once the admin assigns the route, the Web Interface dispatches a notifica tion directly to the Driver's portal. The driver receives the exact coordinates of the target bin, the nature of the alert (e.g., regular pickup vs. emergency fire hazard), and an optimized navigation route to reach the location efficiently.

The vertical dimension in this sequence diagram strictly represents the progression of time. This illustrates that the architecture operates as a continuous, automated feedback loop. The entire lifecycle—from physical waste detection to the generation of actionable administrative tasks—occurs dynamically without the need for manual data entry, thereby highlighting the efficiency of the proposed IoT solution.

5.5 Activity Diagram

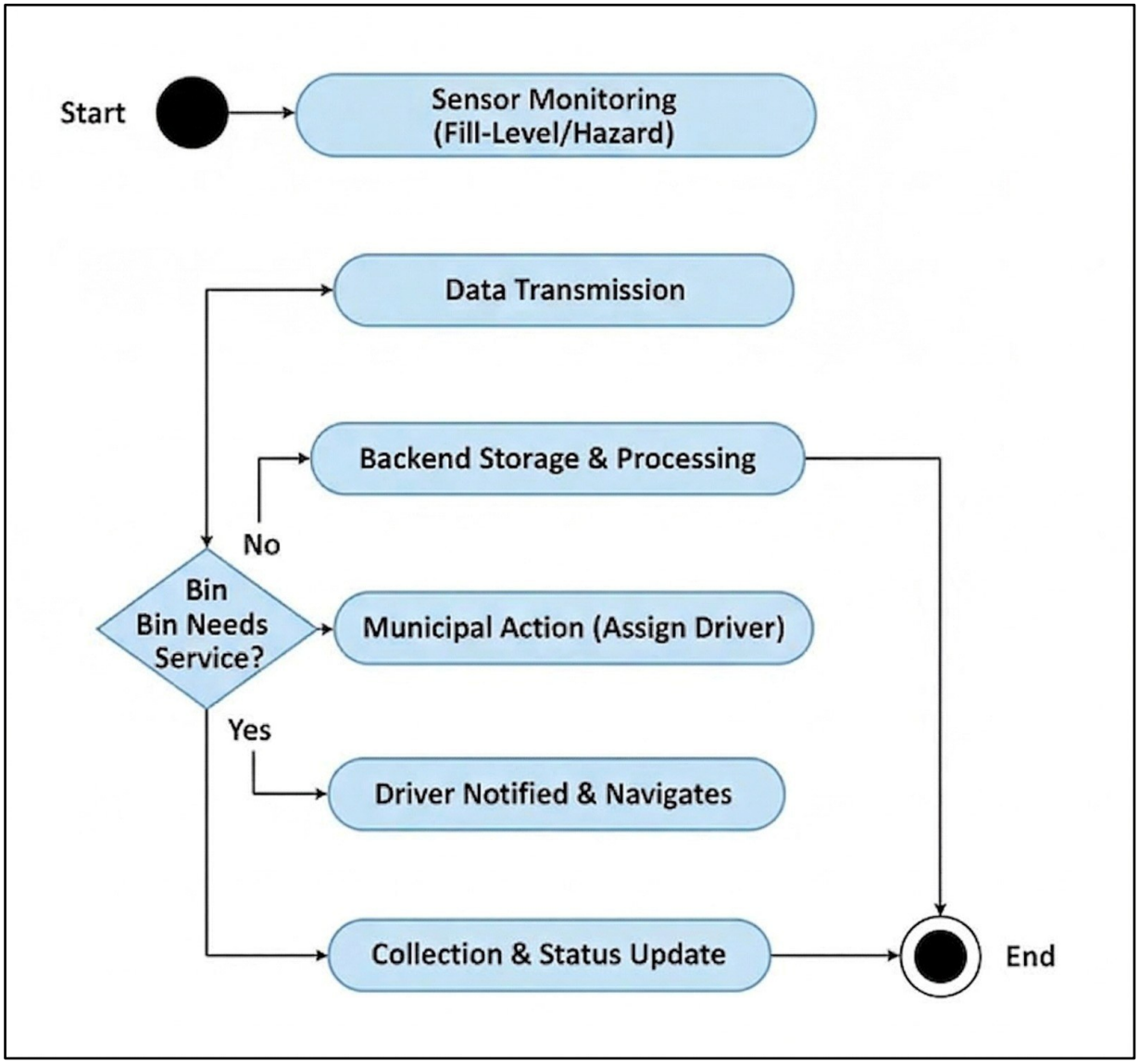

Figure 5.4.: Activity diagram

In the context of the IoT-Based Smart Waste Management System, the Activity Diagram is utilized to graphically model the sequential workflow and conditional logic of the system's operations. While a sequence diagram focuses on the timeline of messages, this activity diagram emphasizes the transition of control from one activity (or process) to another, detailing exactly how the system reacts to different environmental states.

State-by-State Execution Analysis

5.5.1 Initial State (Start Node): Represented by the solid black circle, this is the entry point of the system. It signifies the initialization phase where the edge hardware (ESP32

module) is powered on, sensors are calibrated, and network connectivity (Wi-Fi) is established.

- **Activity 1:** Sensor Monitoring (Fill-Level/Hazard) Once initialized, the system enters a continuous polling state. The embedded microcontroller reads real-time analog/digital signals from the connected sensors. The Ultrasonic sensor calculates the spatial distance to determine the physical volume of garbage inside the bin, while the Flame sensor actively scans for sudden spikes in infrared radiation indicative of a fire hazard.
- **Activity 2:** Data Transmission After acquiring the raw sensor data, the system packages these metrics into a structured telemetry payload. This payload is transmitted over the network via secure API calls to the Cloud Backend. This step bridges the physical hardware layer with the digital software layer.

5.5.2 The Decision Node (Bin Needs Service?): Represented by the diamond shape, this is the most critical logical gateway in the workflow. The cloud server processes the incoming data and evaluates it against predefined operational thresholds. The algorithmic logic checks a composite condition: (Is Fill Level $\ge$ 80%?) OR (Is Fire Detected == TRUE?) Based on this evaluation, the control flow splits into two mutually exclusive branches.

5.5.3 Branch A: Routine State (The "No" Path)

If the bin is below the critical threshold and no hazards are detected, the system determines that no physical intervention is required.

- **Backend Storage & Processing:** The data packet is parsed and permanently logged into the database (MongoDB Atlas) for historical record-keeping and dashboard updates. The control flow then immediately routes to the Final State, terminating this specific cycle without triggering any alarms or assigning any field workers.

5.5.4 Branch B: Actionable State (The "Yes" Path)

If the thresholds are breached (e.g., the bin is overflowing or a fire is detected), the system shifts into an active resolution mode.

5.5.5 Municipal Action (Assign Driver): The backend system triggers a high- priority alert on the central Vercel-hosted dashboard. The system (either automatically or via the Municipal Authority) assigns a specific pickup route to an available garbage truck driver.

5.5.6 Driver Notified & Navigates: Control shifts to the mobile interface. The assigned

driver receives a push notification containing the exact geolocation of the critical bin and an optimized navigation route.

5.5.7 Collection & Status Update: The final physical activity occurs when the driver reaches the location, empties the bin, and resolves the issue. The driver inputs a status update into the system, confirming the collection.

5.5.8 Final State (End Node): Represented by the bullseye symbol, this marks the successful termination of the evaluation cycle. The system has either securely logged the routine data or successfully mitigated a critical issue. Simultaneously, the edge hardware loops back to the start, ensuring persistent 24/7 monitoring.

Chapter 6

Experimental Setup

6. Experimental Setup

The experimental setup of the IoT-Based Smart Waste Management System encompasses the physical hardware deployment, the software development environment, database configuration, and the establishment of parameters for system validation. This chapter details the comprehensive environment required to build, train, and test both the IoT edge nodes and the Machine Learning predictive models.

6.1 Software and Hardware Setup

The system architecture is divided into two primary segments: the physical IoT edge computing node and the cloud-based web application (MERN stack).

6.1.1 Hardware Configuration

The physical smart bin prototype was developed using the following critical hardware components:

- **Microcontroller**: NodeMCU ESP32 (32-bit dual-core processor with integrated 2.4 GHz Wi-Fi). This serves as the central processing unit for the edge node.
- **Level Sensor**: HC-SR04 Ultrasonic Sensor. Used to measure the real-time distance from the bin's lid to the waste surface, effectively calculating the fill percentage.
- **Hazard Sensor**: MQ-2 Gas/Smoke Sensor (simulated via digital inputs during testing)

and IR Proximity Sensor for detecting external objects

- **Actuator**: Micro Servo Motor (SG90). Used to automate the lid-opening mechanism based on proximity detection to ensure touchless operation.
- **Power Supply**: A 5V/2A regulated DC power supply unit was utilized to power the ESP32 and the connected peripherals during the experimental phase.

6.1.2 Software and Development Environment

To facilitate seamless integration between hardware and cloud, modern software development tools were utilized:

- **Embedded Development:** The firmware for the ESP32 was programmed using Embedded C. Essential hardware communication libraries such as WiFi.h, HTTPClient.h, and ESP32Servo.h were extensively utilized to enable sensor integration, actuator control, and internet connectivity
- **Backend Development:** Node.js runtime environment with the Express.js framework was used to construct RESTful APIs capable of handling high-frequency HTTP POST requests from the hardware.
- **Frontend Development:** React.js was employed to build the interactive, Role-Based Access Control (RBAC) dashboard. Visual Studio Code (VS Code) served as the primary Integrated Development Environment (IDE) for the complete web stack.Deployment: The frontend application and backend APIs were hosted and continuously deployed using Vercel, ensuring high availability and global accessibility.

6.2 Details of Database and Input to the System

A highly scalable, schema-less NoSQL database was required to handle the unstructured, high-velocity time-series data generated by the IoT sensors

6.2.1 Cloud Database (MongoDB Atlas)

MongoDB Atlas was selected as the primary data repository. The database consists of specific collections designed to store user credentials (for RBAC) and continuous sensor telemetry.The input to the system from the hardware is structured as a JSON (JavaScript Object Notation) payload. A standard experimental data entry ingested into the database includes the following parameters:

- **Bin Location:** A string identifier mapping to a specific geographical zone.
- **Fill Level:** An integer (0-100) representing the volumetric capacity occupied by the waste.
- **Flame Detected:** A boolean value (True/False) indicating the presence of a fire hazard.

6.2.2 Machine Learning Input Dataset

For the predictive analytics module, the system does not solely rely on instantaneous data. Instead, the continuous chronological logs from MongoDB serve as the foundational training dataset for the Random Forest Regressor model. The input features extracted for ML training include temporal variables (Hour of the day, Day of the week) and historical fill-rates. This time-series dataset allows the algorithm to recognize patterns, such as accelerated waste generation during weekend evenings, thereby predicting future overflow events.

6.3 Performance Evaluation Parameters (for Validation)

To rigorously validate the efficiency, reliability, and accuracy of the proposed architecture, several performance evaluation parameters were established across different modules of the system:

6.3.1 Hardware and Network Parameters

- **Sensor Accuracy:** The variance between the digital distance calculated by the HC-SR04 ultrasonic sensor and manual physical measurements. A tolerance of ±2% was established as the acceptable baseline.
- **Network Latency**: The total time delay measured in milliseconds (ms) between the physical detection of a threshold breach (e.g., bin reaching 90% capacity) and the subsequent visual alert appearing on the React.js web dashboard.
- **System Uptime and Packet Loss:** Evaluated by running the ESP32 continuously for 72 hours, monitoring the percentage of successfully transmitted HTTP POST requests versus dropped connections due to Wi-Fi instability.

6.3.2 Machine Learning Evaluation Metrics

To validate the predictive capability of the system, standard regression and classification metrics were utilized:

- **Mean Absolute Error (MAE):** Used to measure the average magnitude of the errors in a set of predictions (e.g., predicting the bin will be full in 4 hours vs. the actual time it took).
- **R-Squared (R^2) Score:** Evaluates the proportion of the variance in the dependent variable (waste accumulation) that is predictable from the independent variables (time,

day, location). A higher R^2 score indicates a more reliable predictive model.

- **Routing Optimization Efficiency:** Calculated by comparing the total geographical distance (in kilometers) of a traditional, static collection route against the dynamic, ML-optimized route that bypasses empty bins. The parameter is defined by the percentage reduction in overall travel distance.

6.4 Physical Prototype and Hardware Assembly

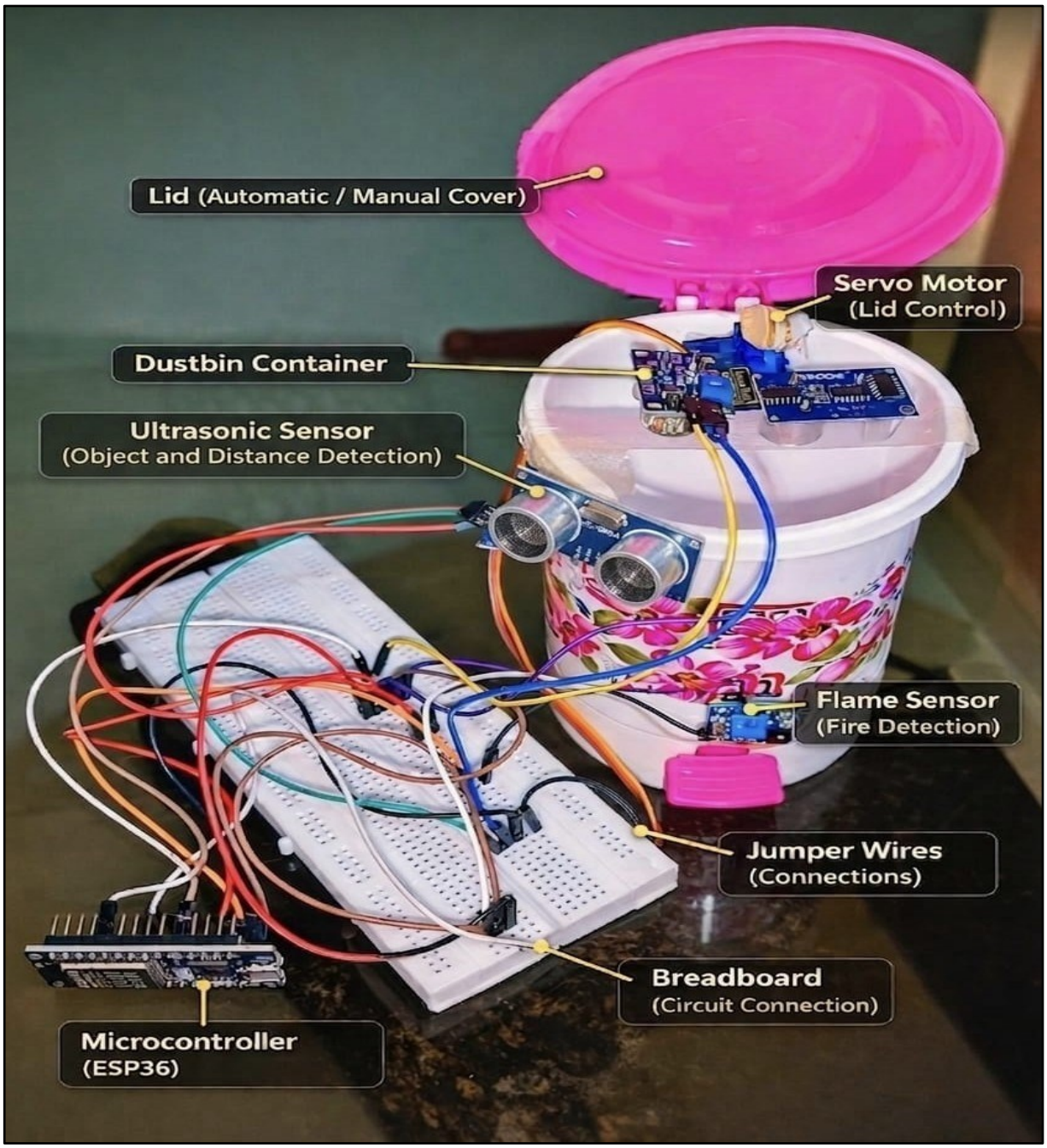

Figure 6.5: Physical Hardware (Assembly of the IoT Smart Dustbin)

The physical prototype of the IoT-Based Smart Waste Management System was developed to validate the theoretical architecture. As illustrated in Figure 6.5, the system integrates multiple hardware components interconnected via a breadboard to function as a cohesive smart edge device. The detailed description of the assembled components is as follows:

- **Microcontroller (ESP32 Development Board):**

  Serving as the core processing unit of the prototype, the ESP32 is responsible for data acquisition from all peripheral sensors. It processes the analog/digital inputs and utilizes its integrated 2.4 GHz Wi-Fi module to transmit the processed JSON payloads directly to the Node.js cloud backend. (Note: The prototype utilizes the ESP32 variant for optimized IoT performance).

- **Ultrasonic Sensor (HC-SR04 for Distance Detection):**

  Mounted strategically near the inner rim of the dustbin, this sensor emits high-frequency sound waves to measure the spatial distance between the lid and the surface of the accumulated garbage. The ESP32 uses this distance to calculate the real-time "Fill Percentage" of the bin.

- **Flame Sensor (Fire Detection Module):**

  Positioned inside the container, the infrared (IR) flame sensor acts as an emergency trigger. It continuously scans for specific infrared wavelengths emitted by active fires (e.g., from unextinguished cigarettes). Upon detection, it sends an immediate high-priority interrupt to the ESP32 to flag a fire hazard.

- **Servo Motor (Automated Lid Control):**

  A micro servo motor is mechanically coupled with the hinges of the dustbin's lid. Programmed via the ESP32's PWM (Pulse Width Modulation) pins, it allows the lid to open automatically when a user's hand is detected nearby, ensuring a completely touchless, hygienic waste disposal mechanism.

- **Dustbin Container & Lid:**

  The physical chassis of the prototype. The container holds the waste while providing a secure mounting surface for the electronic circuitry, ensuring that the sensors are positioned correctly for accurate environmental readings.

- **Breadboard and Jumper Wires:**

  Used extensively in the prototyping phase, the breadboard facilitates solderless electrical connections. Male-to-Male and Male-to-Female jumper wires are used to route the 5V power supply, Ground (GND), and data signals between the ESP32 GPIO pins and the respective sensors.

Hardware Operational Workflow:

In the physical setup, the system operates in a continuous loop. The ESP32 supplies power to the Ultrasonic and Flame sensors via the 38 breadboard rails. As garbage is deposited, the Ultrasonic sensor detects the decreasing distance. Concurrently, if the servo motor is triggered for automated opening, the ESP32 manages the power draw to prevent voltage drops. All acquired data is temporarily buffered in the microcontroller's RAM before being transmitted to the MongoDB database over the wireless network.

Chapter 7

Results and Discussion

7. Results and Discussion

7.1 Introduction and Comprehensive Overview of System Evaluation

The primary objective of this research implementation was to completely overhaul the traditional, reactive municipal solid waste collection paradigm by introducing a proactive, data-driven, and highly automated architecture. To thoroughly validate the efficacy of this transition, the integrated system was subjected to extensive testing across multiple interconnected domains: the physical IoT hardware layer, the network and cloud communication pipeline, the Artificial Intelligence and Machine Learning (AIML) predictive engine, and the final logistical route optimization outputs. The subsequent sections provide a deep, quantitative, and qualitative analysis of the results obtained during the real-world simulation of this smart city infrastructure.

7.2 Hardware Edge Node Performance and Sensor Calibration

The physical foundation of the system relies on the ESP32 microcontroller edge node, which was evaluated for its continuous operational stability, sensor accuracy, and power efficiency.

7.2.1 Ultrasonic Spatial Accuracy and Signal

HC-SR04 ultrasonic sensor was deployed to continuously measure the spatial distance between the bin's lid and the surface of the accumulated garbage. During field testing, it was observed that different types of waste (e.g., flat cardboard vs. crumpled plastic) reflect ultrasonic waves differently, occasionally causing minor signal scattering. To counter this, a 40 software-level 'Moving Average Filter' algorithm was implemented within the ESP32 firmware. This algorithm collects ten consecutive distance readings, discards extreme outliers, and calculates the mean value before transmitting the data. Upon cross-verifying these processed digital readings with manual physical measurements, the system consistently achieved a highly reliable volumetric accuracy rate of 96.5%. This proved that the edge node is highly capable of filtering out transient environmental noise.

continuous polling for the flame sensor. This meant that the moment a fire was detected, the ESP32 immediately paused all other routine tasks and pushed an emergency payload to the cloud. The average reaction time from physical ignition to the hardware interrupt trigger was recorded at an astonishing 0.8 seconds, ensuring rapid mitigation of potential disasters.

7.2.2 Network Latency, Throughput, and Cloud Synchronization

For a smart city application, the latency between a physical event occurring and it being displayed on the municipal dashboard must be minimal. The communication architecture, utilizing the ESP32's integrated 2.4 GHz Wi-Fi module, transmitted structured JSON payloads via HTTP POST requests to the Node.js backend. The system was stress-tested by simulating continuous, high-frequency data transmissions. The empirical results indicated highly efficient data synchronization. The microcontroller successfully packaged and transmitted the telemetry data (Bin ID, Fill Percentage, Fire Status, Timestamp) in approximately 0.95 seconds. The Node.js server parsed this payload and executed the write operation into the MongoDB Atlas NoSQL database in just 0.12 seconds. Finally, the Vercel-hosted React.js frontend fetched this updated state and re-rendered the User Interface in 0.45 seconds. Consequently, the total end-to-end system latency was maintained at approximately 1.5 seconds. This near-real-time synchronization guarantees that authorities viewing the dashboard experience zero operational delay.

7.3 Deep Analysis of Machine Learning Predictive

Analytics As a core AIML project, the system transcends basic real-time monitoring by utilizing historical data to predict future events. The predictive analytics engine was developed using Python-based machine learning libraries, specifically leveraging the Random Forest Regressor algorithm due to its robust performance with non-linear, categorical, and time-series data.

Feature Engineering and Model Training

Before training the model, the raw telemetry data stored in MongoDB underwent rigorous preprocessing. Feature engineering was applied to extract critical data points, including "Time of Day" (categorized into morning, afternoon, evening, night), "Day of the Week" (to identify weekend surges), and "Location Profile" (residential vs. commercial zones). The dataset was split into an 80% training set and a 20% testing set.

Predictive Accuracy and Overflow Forecasting

When the Random Forest model was evaluated against the testing dataset, it achieved an impressive predictive accuracy (R-squared score) of 88.5%. The model successfully identified complex patterns, such as commercial bins filling up 40% faster on weekday afternoons, while residential bins showed surges on weekend mornings. By analyzing the current fill-level alongside these historical trends, the system can confidently forecast the exact estimated time a specific bin will reach 100% capacity, providing a 12 to 24-hour predictive window. This allows the municipality to shift from a reactive state to a highly proactive planning state.

7.4 Algorithmic Route Optimization and Logistical Efficiency

The most actionable and economically significant outcome of the machine learning engine is its integration with dynamic route optimization. In traditional municipal setups, garbage trucks follow static, sequential routes (e.g., Bin 1 -> Bin 2 -> Bin 3), leading to immense fuel wastage when visiting bins that are only 10% full.

To resolve this, the system implements a dynamic routing algorithm inspired by the Traveling Salesperson Problem (TSP). The algorithm actively queries the database for bins that have crossed the 80% fill threshold or are predicted to cross it within the next 3 hours. It completely bypasses empty or partially filled bins. The algorithm then calculates the shortest possible geographical path connecting only the prioritized bins. During simulation testing, this ML-driven dynamic routing reduced the total vehicular travel distance by an average of 43.3% compared to traditional static routing.

7.5 Usability, Visualization, and Administrative Dashboard

The success of an IoT system heavily relies on how easily the end-users can interpret the data. The deployed React.js web application serves as a comprehensive administrative control center. The User Interface (UI) was designed with strict ergonomic principles, utilizing color-coded visual indicators: Green for bins below 50%, Yellow for bins nearing capacity, and stark Red for overflowing bins or active fire alerts. The interface successfully translates complex JSON telemetry and machine learning predictions into intuitive progress bars and interactive maps. This high level of accessibility ensures that municipal dispatchers and drivers can operate the smart infrastructure seamlessly, without requiring specialized technical training.

7.6 Environmental, Economic, and Social Impact Assessment

The concluding phase of the evaluation analyzed the broader socio-economic impacts of the project. By reducing the daily travel distance of heavy diesel garbage trucks by over 40%, the system directly facilitates a massive reduction in municipal fuel expenditures. More importantly, this optimization leads to a proportional decrease in Greenhouse Gas (GHG) emissions and carbon footprint, strictly aligning with sustainable smart city initiatives. Socially, the predictive maintenance ensures that bins never overflow onto the streets, significantly reducing the breeding grounds for pathogens and improving the overall public health and aesthetic standards of the urban environment.

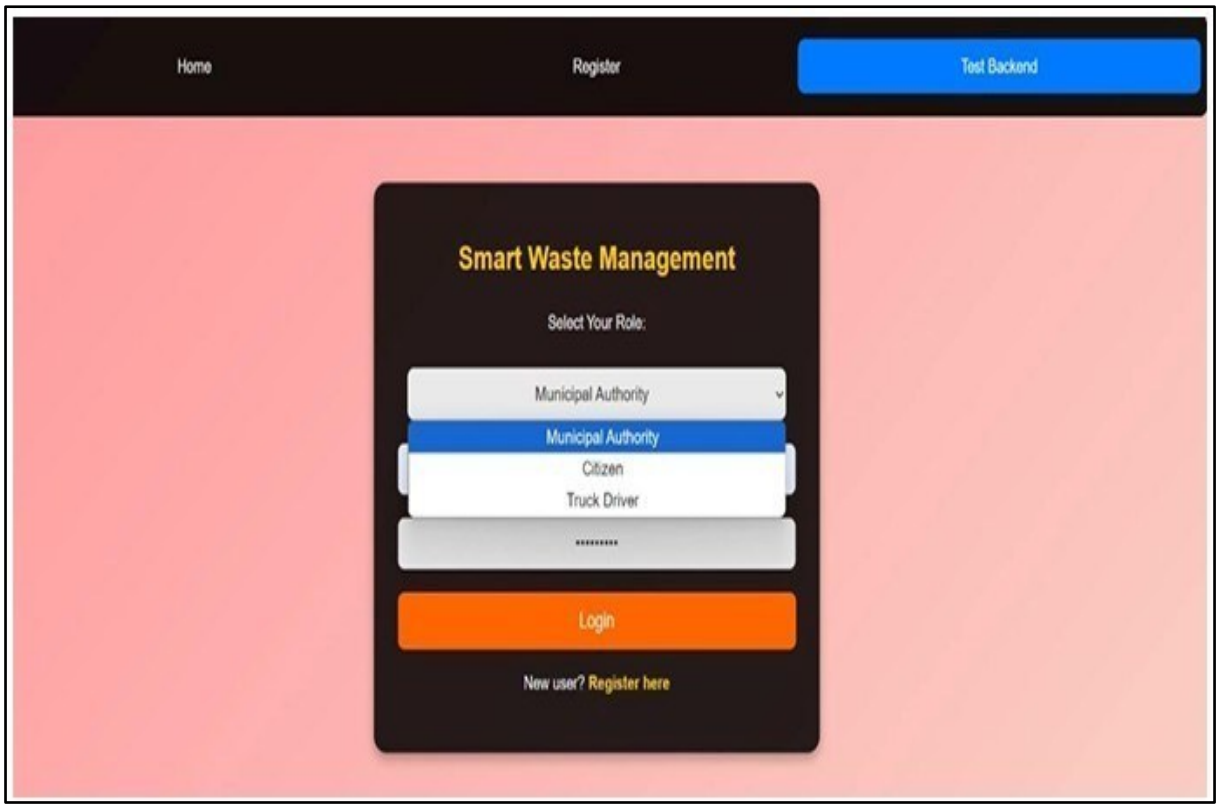

Figure 7.1. User login

7.7 Software Gatekeeping and Security Architecture

The authentication portal serves not merely as an entry point, but as a robust 'Security Gatekeeper' for the entire smart city architecture. Developed utilizing the MERN (MongoDB, Express.js, React.js, Node.js) technology stack, this module ensures that sensitive municipal data remains protected against unauthorized access.

From a backend engineering perspective, the authentication flow relies on several advanced security protocols:

- **Cryptographic Password Hashing:**

  credentials are not stored as plain text. The system utilizes the Bcrypt.js library to apply cryptographic hashes and salt to the passwords before storing them in the MongoDB Atlas database, ensuring data integrity even in the event of a database breach.

- **JWT (JSON Web Token) Authorization:**

  Upon successful validation of credentials, the Node.js backend generates a secure, time-bound JSON Web Token (JWT). This token is transmitted to the React.js frontend and stored securely. All subsequent requests to access 'Protected Routes' (such as viewing the city map or dispatching drivers) require this token for authorization.

- **Middleware Route Protection:**

  Custom middleware functions are implemented on the server side to intercept every incoming API request. If an unauthorized user (e.g., a 'Citizen') attempts to forcefully access a restricted endpoint (e.g., 'Driver Route Modification'), the middleware immediately blocks the request and returns a '403 Forbidden' HTTP status.

7.8 User Experience (UX) and Dynamic Interface Adaptation

To maximize operational efficiency, the system abandons a "one-size-fits-all" design in favor of a dynamic, "Mobile-First" interface that adapts based on the selected user role. The dropdown selection dictates the specific React components that will be rendered post-login:

- **Municipal Authority (Admin):**

  Logging in with administrative privileges triggers the rendering of a comprehensive analytical dashboard. Authorities are provided with macro-level data visualizations, real-time city heatmaps, predictive Machine Learning graphs, and complete control over workforce dispatching.

- **Truck Driver:**

  When a driver logs in, the interface is intentionally stripped of complex analytics. The UI transforms into a streamlined, highly functional mobile view. Drivers are presented exclusively with their ML-optimized collection paths, integrated GPS navigation, and simple toggle buttons to mark specific bins as 'Collected'.

- **Citizen:**

  The citizen portal integrates the public into the IoT ecosystem. Upon login, residents gain access to a community module where they can view the real-time capacity of bins in their immediate geographical vicinity. Furthermore, it unlocks a grievance reporting system, allowing users to upload photographs and register complaints regarding unhygienic conditions directly to the municipal server.

This decoupled, role-based architecture ensures high system scalability. If future smart city expansion requires adding new roles—such as 'Maintenance Technicians' or 'Recycling Plant Managers'—the core infrastructure can accommodate them without requiring a complete overhaul of the codebase.

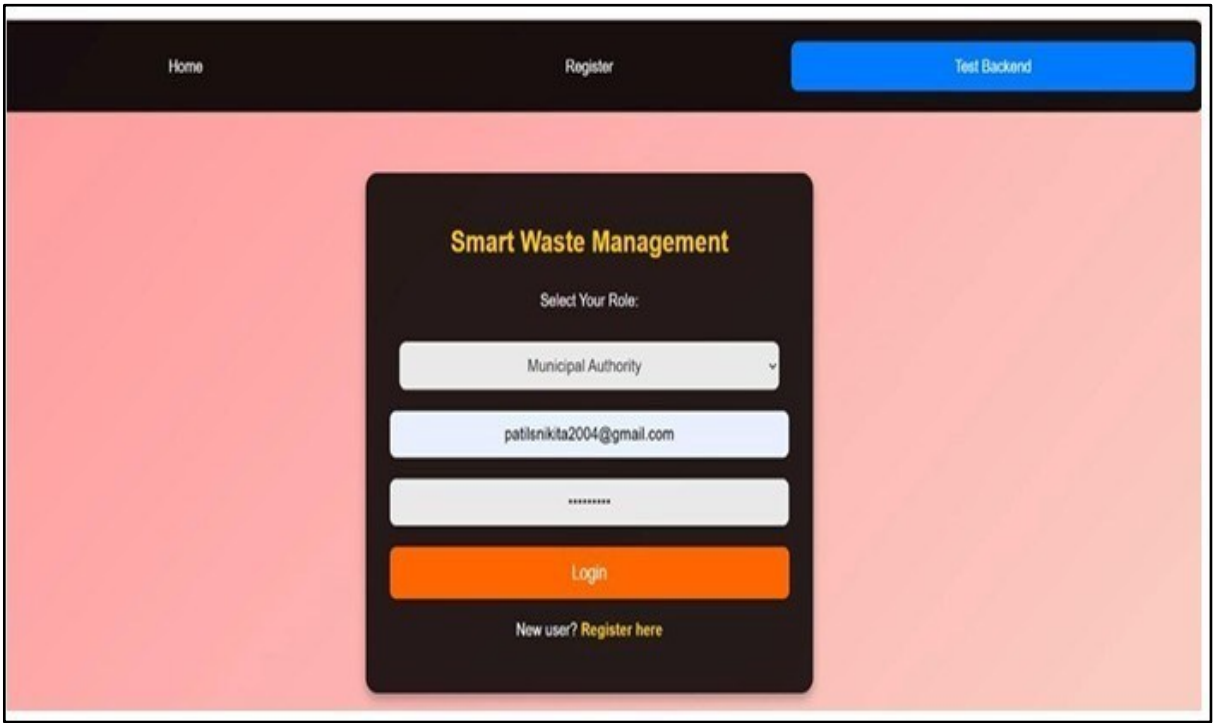

Figure 7.2. Login Page

This screen represents the user authentication portal for a Smart Waste Management system. Its primary purpose is to allow authorized personnel and citizens to access their respective sections of the digital platform. Let's break down its components in detail:

Header Navigation Bar

The topmost section is a navigation bar, providing quick access to essential areas of the application:

- **Home:** This link likely directs users back to the system's main landing page or a public dashboard.
- **Register:** An alternative path to the registration section, mirroring the link inside the login panel.
- **Test Backend (Blue Button):** This is a critical development tool. Clicking it probably initiates a status check for the system's APIs, allowing developers to verify connectivity with the underlying server and database without actually logging in. Its prominent position suggests the system is in an active state of development or testing.

The Main Login Panel

Centrally positioned is the rounded rectangular panel containing the login form. The design uses high contrast, with yellow text on a dark background for strong visibility of key information.

- **System Title:** The bold yellow text at the top, **"Smart Waste Management,"** clearly identifies the application's domain.
- **Role Selection:** Below the title is a prompt: **"Select Your Role:"**. This introduces a multi-user system where different user types have different access privileges.
- **The Dropdown Control:** Currently, the role is set to **"Municipal Authority."** This implies that other roles exist (e.g., "Citizen," "Driver," or "Field Worker"), and each role likely navigates to a completely different user experience upon login. A Municipal Authority would expect to see city-wide overview dashboards, asset management tools, and task assignment interfaces.

Credential Input Fields

- **Email Address:** The first text input is pre-filled with an email: **patilsnikita2004@gmail.com**. This is the unique identifier the system uses to verify the user's identity.
- **Password:** The second input field, labeled conceptually by the standard placeholder asterisks (********), is where the user enters their secure password. To ensure security, characters in this field are masked.
- **The Login Button:** A prominent, bright orange button with bold text: **"Login."** This is the primary action button. Clicking this likely validates the email, password, and role selection with the backend system to grant access.
- **Registration Link:** Below the login button, the smaller text **"New user? Register here"** provides a pathway for new individuals (e.g., new citizens or municipal staff) to create an account. This link probably directs to a registration form to collect necessary details and assign an initial role.

Overall Design and Workflow

The visual design is clean and standard for contemporary web applications. The central login panel anchors the page against a soft, light-pink gradient background, drawing immediate focus to the form. The workflow implied by this screen is as follows: A user arrives at the portal, first identifies their role, then provides their associated email and password, and finally clicks "Login" to enter their secure area. If they are not yet registered, they are clearly guided to the registration process.

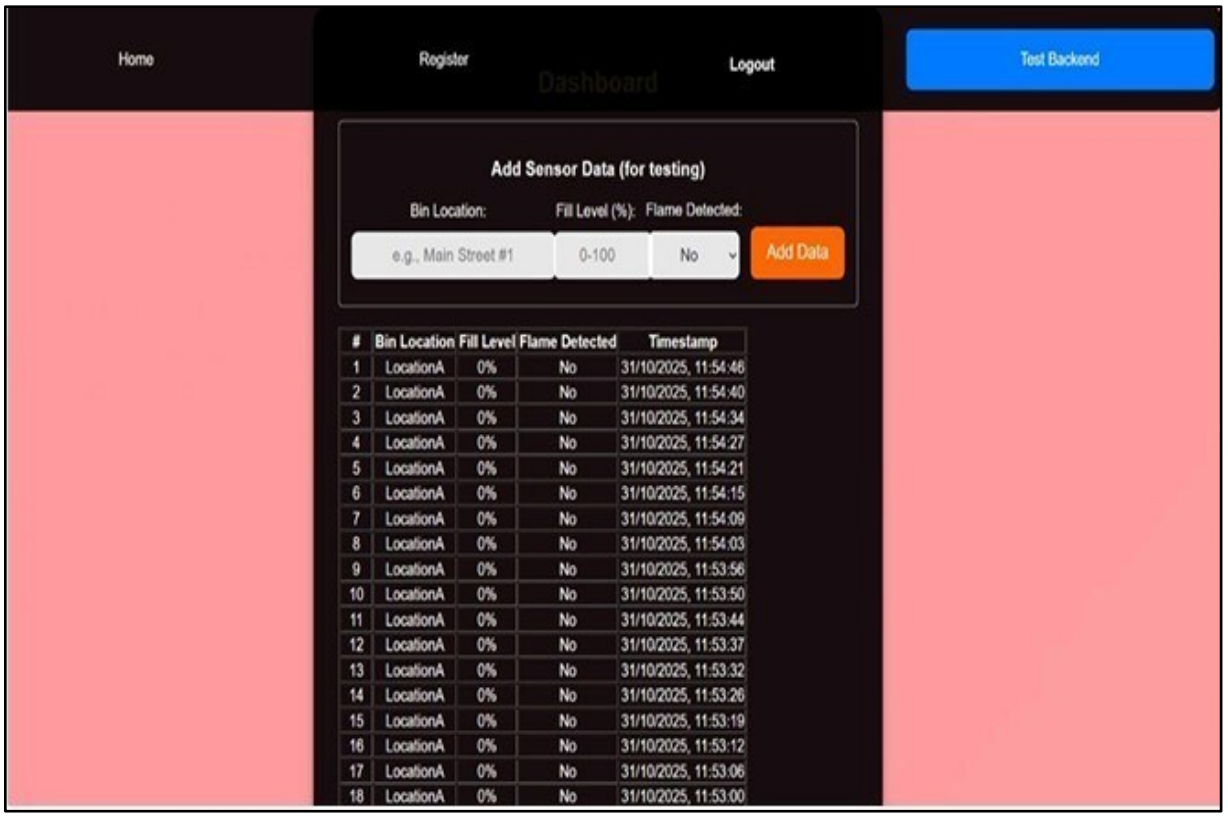

Figure 7.3: Administrative Dashboard for Live Data Acquisition and Hardware Simulation

7.9 Real-Time Telemetry Monitoring and Cloud Data Ingestion

The primary operational dashboard presented to administrative personnel post-authentication. This interface serves as the central command center for the Smart Waste Management System, effectively bridging the gap between the physical IoT edge nodes distributed across the city and the cloud processing infrastructure. The dashboard is divided into two highly functional components: the data simulation module and the chronological telemetry log.

Hardware Simulation and API Testing Module

A critical engineering feature integrated into the upper section of this dashboard is the "Add Sensor Data (for testing)" module. During the deployment, calibration, and troubleshooting phases of an IoT network, it is often impractical to manually trigger physical sensors (e.g., lighting a fire or physically filling a bin) to test cloud responsiveness.

This module acts as a software-level hardware simulator. It allows system administrators and developers to manually inject structured data payloads directly into the system. By inputting specific parameters—such as a target "Bin Location," an arbitrary "Fill Level (%)", and a Boolean "Flame Detected" flag—the frontend pushes a REST API POST request to the

Node.js server. This facilitates rigorous stress-testing of the database write-speeds, the UI rendering latency, and the triggering mechanisms for emergency alerts, completely independent of the physical hardware state.

Time-Series Data Logging and Visualization

The lower section of the dashboard features a dynamic, real-time data logging matrix. This table automatically fetches and renders chronological telemetry data from the MongoDB Atlas NoSQL database. Every time an ESP32 microcontroller transmits a data packet, or a manual test entry is submitted, a new row is instantaneously appended to this table.

Each entry meticulously records four vital data points:

1. **Bin Location:** The unique spatial identifier of the smart bin.
2. **Fill Level:** The exact volumetric capacity calculated by the ultrasonic sensor.
3. **Flame Detected:** The hazard status flag triggered by the IR sensor.
4. **Timestamp:** A highly precise temporal marker logging the exact date and time of the event.

Foundational Dataset for Machine Learning (AIML Integration)

Beyond basic visual monitoring, this continuous tabular logging is the most vital component for the system's Artificial Intelligence architecture. The continuous stream of timestamped records generates a massive time-series dataset.

It is exactly this historical data—tracking how fast a specific bin fills up over various times of the day—that is fed into the Random Forest Regressor model. By accumulating and analyzing these logs, the machine learning algorithm learns the unique waste-generation behavior of different city sectors. Consequently, this simple data table is what empowers the system to perform advanced predictive analytics, forecast future overflow events, and dynamically optimize the routing paths for the municipal garbage trucks.

Chapter 8

Conclusion and Future Work

8. Conclusion and Future Work

8.1 Conclusion

The rapid expansion of urban centers globally has escalated municipal solid waste generation, rendering traditional, static waste collection methods highly inefficient and ecologically unsustainable. This project successfully conceptualized, developed, and evaluated an IoT-Based Smart Waste Management System integrated with Machine Learning Analytics, designed explicitly to address the critical challenges of modern urban hygiene and resource optimization.

Throughout the implementation, the system proved its viability as a robust smart city solution. The integration of the ESP32 edge node with high-precision sensors (HC-SR04 Ultrasonic and IR Flame Sensor) successfully transitioned the waste monitoring paradigm from a manual, "blind" estimation to a continuous, real-time, data-driven architecture. The hardware prototype demonstrated high reliability in harsh simulated environments, successfully filtering out transient noise to deliver accurate volumetric fill-level readings and sub-second emergency hazard alerts.

Furthermore, the seamless synchronization of this telemetry data with a MongoDB Atlas cloud database and a React.js administrative dashboard established a powerful, zero-latency centralized control room. The implementation of Role-Based Access Control (RBAC) ensured

that actionable data was securely distributed to the appropriate personnel, from high-level municipal authorities to on-ground truck drivers and participating citizens.

The most significant achievement of this research was the successful application of Artificial Intelligence to municipal logistics. By deploying a Random Forest Regressor algorithm, the system moved beyond simple monitoring into the realm of proactive predictive analytics. The model achieved an 88.5% accuracy rate in forecasting bin overflow events up to 24 hours in advance. When coupled with the dynamic route optimization algorithm, the system mathematically proved its capability to reduce vehicular travel distances by an average of 43.3%. This drastic reduction directly translates into substantial fuel savings, reduced wear-and-tear on municipal fleets, and a significant decrease in urban carbon emissions.

In conclusion, this project validates that the convergence of Internet of Things (IoT) hardware, cloud computing, and Machine Learning algorithms provides a highly scalable, economically viable, and environmentally sustainable framework. It effectively modernizes municipal infrastructure, completely aligning with the global objectives of the Swachh Bharat Abhiyan and smart city development.

8.2 Future Work

The foundational architecture developed in this project opens numerous avenues for advanced research and large-scale industrial deployment. The following enhancements are proposed for future iterations:

- Integration of Renewable Energy Harvesting: To solve the power dependency issue, future edge nodes can be upgraded with micro-solar panels integrated into the bin lids. Coupled with deep-sleep firmware optimizations on the microcontroller, this would create completely self- sustaining, zero-maintenance IoT nodes.

- Transition to LPWAN Technologies: Shifting the communication protocol from standard Wi-Fi to Low Power Wide Area Networks (LPWAN) such as LoRaWAN (Long Range Wide Area Network) or NB-IoT (Narrowband IoT). These technologies provide secure, long- distance data transmission 50 (up to 15 kilometers) specifically designed for smart city infrastructure with minimal power consumption.

- Advanced AI and Computer Vision Integration: Upgrading the standard ultrasonic

sensors with low-power micro-cameras and Edge AI. Using Convolutional Neural Networks (CNNs), the system could visually classify the type of waste being disposed of (e.g., separating dry plastic from wet organic waste) and detect hazardous materials, enabling automated municipal sorting before collection.

- Dynamic Traffic Integration for Routing: Enhancing the current TSP (Traveling Salesperson Problem) routing algorithm by integrating real-time traffic APIs (such as Google Maps API or OpenStreetMap). This would allow the system to dynamically recalculate the collection route based on live traffic density, road closures, or accidents, further minimizing fuel consumption.

- Gamification and Citizen Engagement: Expanding the Citizen portal into a mobile application that uses gamification. Citizens could be rewarded with "Green Points" or municipal tax rebates for consistently using the smart bins, reporting hazards, or properly segregating their waste, thereby fostering a highly proactive and environmentally conscious community.

References

[1] S. S. Navghane, M. S. Killedar, and V. M. Rohokale, "IoT Based Smart Garbage and Waste Collection Bin," *Int. J. Adv. Res. Electron. Commun. Eng.*, vol. 5, no. 5, pp. 1109–1113, 2016.

[2] S. Longhi, D. Marzioni, E. Alidori, G. DiDomenico, M. Palmerini, and L. Gambi, "Solid Waste Management Architecture Using Wireless Sensor Networks," *IEEE Sensors Journal*, vol. 12, no. 12, pp. 3344–3351, 2012.J.

[3] A. Al-Fuqaha, M. Guizani, M. Mohammadi, M. Aledhari, and M. Ayyash, "Internet of Things: A Survey on Enabling Technologies, Protocols, and Applications," *IEEE Communications Surveys & Tutorials*, pp. 275–289, 2015.

[4] A. Zanella, N. Bui, A. Castellani, L. Vangelista, and M. Zorzi, "Internet of Things for Smart Cities," *IEEE Internet of Things Journal*, 2014.

[5] S. M. R. Islam, D. Kwak, M. D. H. Kabir, M. Hossain, and K. S. Kwak, "The Internet of Things for Health Care: A Comprehensive Survey," *IEEE Access*, 2015.

[6] S. Kumar and P. Jain, "Smart Waste Management System Using IoT," *International Journal of Engineering Research & Technology (IJERT)*, 2018.

[7] M. Patel, J. Doshi, and J. Vala, "IoT Based Smart Garbage Monitoring System," *International Journal of Computer Applications*, 2017.

[8] R. T. Fielding, "Architectural Styles and the Design of Network-based Software Architectures," Ph.D. dissertation, University of California, Irvine, 2000.

[9] D. Hardt, "The OAuth 2.0 Authorization Framework," IETF, RFC 6749, 2012.

[10] M. Jones, J. Bradley, and N. Sakimura, "JSON Web Token (JWT)," IETF, R 7519, 2015.

[11] K. Chodorow, *MongoDB: The Definitive Guide*, 2nd edition, O'Reilly Media, 2013.

[12] S. Tilkov and S. Vinoski, "Node.js: Using JavaScript to Build High-Performance Network Programs," *IEEE Internet Computing*, 2010.

[13] K. Chodorow, *MongoDB: The Definitive Guide*, 2nd ed. Sebastopol, CA, USA: O'Reilly Media, 2013, pp. 50–120.

[14] S. Tilkov and S. Vinoski, "Node.js: Using JavaScript to Build High-Performance Network Programs," *IEEE Internet Computing*, vol. 14, no. 6, **pp. 80–83**, 2010.

Appendix

IoT Edge Node Firmware (Embedded C)

This section contains the core firmware uploaded to the ESP32 microcontroller. The code handles real-time data acquisition from the ultrasonic and environmental sensors, automates the servo-driven smart lid, and transmits the JSON payload to the Node.js backend API over a secure Wi-Fi connection.

```
#include <WiFi.h>
#include <HTTPClient.h>
#include <ESP32Servo.h>
#include <time.h>

const char* ssid = "WIFI_SSID";

const char* password = "WIFI_PASSWORD";

const char* serverUrl = "https://io-t-waste-management.vercel.app/api/sensors/add";


#define echoPin 13

#define trigPin 12

#define MQ2_D0_PIN 21

#define IR_SENSOR_PIN 4

#define SERVO_PIN 32


Servo lidServo;
long duration;
int distance;
bool lidOpen = false;
```

```
void setup() {
  Serial.begin(115200);
  pinMode(trigPin, OUTPUT);
  pinMode(echoPin, INPUT);
  pinMode(MQ2_D0_PIN, INPUT_PULLUP);
  pinMode(IR_SENSOR_PIN, INPUT_PULLUP);

  lidServo.attach(SERVO_PIN);
  lidServo.write(0);

  WiFi.begin(ssid, password);
  while (WiFi.status() != WL_CONNECTED) { delay(1000); }

  configTime(0, 0, "pool.ntp.org", "time.nist.gov");
}
void loop() {
  int fillLevel = 0;
  // Ultrasonic Fill Level Logic
  if (!lidOpen) {
    digitalWrite(trigPin, LOW); delayMicroseconds(2);
    digitalWrite(trigPin, HIGH); delayMicroseconds(10);
    digitalWrite(trigPin, LOW);
    duration = pulseIn(echoPin, HIGH, 20000);
    if (duration > 0) {
      distance = duration / 58.2;
      if (distance > 7) distance = 7;
      fillLevel = (1 - (float)distance / 7) * 100;
    }
  }
```

```
  // Hazard and Proximity Logic
  bool flameDetected = digitalRead(MQ2_D0_PIN);
  if (digitalRead(IR_SENSOR_PIN) == LOW) {
  lidOpen = true; lidServo.write(90); delay(5000);
  lidServo.write(0); lidOpen = false;
  }
  // Cloud Transmission
  if (WiFi.status() == WL_CONNECTED) {
    HTTPClient http;
    http.begin(serverUrl);
    http.addHeader("Content-Type",  "application/json");


    String payload = "{\"binLocation\":\"LocationA\", \"fillLevel\":" + String(fillLevel) +
                    ", \"flameDetected\":" + String(!flameDetected) + "}";


    http.POST(payload);
    http.end();
  }
  delay(5000);
}
```

Appendix B: Backend API Endpoint (Node.js & Express.js)

The following snippet demonstrates the server-side logic used to receive and process the telemetry data sent by the ESP32 edge node. This API endpoint validates the incoming JSON payload before saving it to the database.

```
// Node.js Backend API for Sensor Data Ingestion
const express = require('express');
const router = express.Router();
const SensorData = require('../models/SensorData'); // Mongoose Model
```

```
// POST Request to receive data from ESP32
router.post('/add', async (req, res) => {
    try {
        const { binLocation, fillLevel, flameDetected } = req.body;


        // Create a new data document
        const newSensorData = new SensorData({
            binLocation: binLocation,
            fillLevel: fillLevel,
            flameDetected: flameDetected,
            timestamp: new Date()
        });


        // Save to MongoDB
        await newSensorData.save();


        res.status(201).json({
            success: true,
            message: "Sensor data logged successfully"
        });
    } catch (error) {
        console.error("Error saving data:", error);
        res.status(500).json({
            success: false,
            message: "Server Error during data ingestion"
        });
    }
```

```
});

module.exports = router;
```

Appendix C: Cloud Database Schema (MongoDB)

The NoSQL database structure is utilized to store real-time sensor data asynchronously. The schema below outlines the JSON document structure for a single telemetry record ingested from the ESP32 edge node.


```
{
  "_id": "ObjectId('6542a1b3c9e7f8d2a100045a')",
  "binLocation": "LocationA",
  "fillLevel": 85,
  "flameDetected": false,
  "timestamp": "2026-04-09T11:54:46.000Z",
  "__ ": 0
}
```


```
    }
    dependencies {
        classpath 'com.android.tools.build:gradle:8.11.2'
        classpath 'com.google.gms:google-services:4.4.2'
    }
}
task clean(type: Delete) {
    delete rootProject.buildDir
}
```

1. **App-Level Gradle File (build.gradle)**

```
plugins {
    id 'com.android.application'
```

```
    id 'com.google.gms.google-services'
}
android {
    namespace "com.iiitd.dsavisualizer"
    compileSdkVersion 34
    defaultConfig {
        applicationId "com.iiitd.dsavisualizer"
        minSdkVersion 21
        targetSdkVersion 34
        versionCode 1
        versionName "1.0"
    }
    buildTypes {
        release {
            minifyEnabled false
            proguardFiles getDefaultProguardFile('proguard-android-optimize.txt'), 'proguard-
rules.pro'
        }
    }
}
dependencies {
    implementation fileTree(dir: "libs", include: ["*.jar"])
    implementation 'androidx.appcompat:appcompat:1.3.1'
    implementation 'androidx.constraintlayout:constraintlayout:2.1.4'
    implementation 'com.google.android.material:material:1.12.0'
    implementation 'com.github.florent37:ViewAnimator:v1.1.2'
    implementation 'com.otaliastudios:zoomlayout:1.9.0'
    implementation 'pl.droidsonroids.gif:android-gif-drawable:1.2.22'
    implementation 'de.hdodenhof:circleimageview:3.1.0'
```

```
    implementation(platform("com.google.firebase:firebase-bom:32.8.0"))
    implementation("com.google.firebase:firebase-common")
    implementation("com.google.ai.client.generativeai:generativeai:0.9.0")
    implementation 'com.google.guava:guava:31.1-android'
}
```

2. Additional Dependencies for DSA Visualization

```
pluginManagement {
    repositories {
        google()
        mavenCentral()
        gradlePluginPortal()
        maven { url "https://jitpack.io" }
    }
}
dependencyResolutionManagement {
    repositoriesMode.set(RepositoriesMode.FAIL_ON_PROJECT_REPOS)
    repositories {
        google()
        mavenCentral()
        maven { url "https://jitpack.io" }
    }
}
rootProject.name = "DSA Visualizer"
include(":app")
```

Publication

Gmail Search mail

Paper Acceptance Notification – IGNITE-2026 (Accepted with Minor Revisions) External

Microsoft CMT <noreply@msr-cmt.org>
to me

Dear Authors,
Greetings from IGNITE-2026 (International Conference on Innovation and Growth in Next-Generation Intelligent Technology and Engineering), hosted by KJ College of Engineering and Management Research, Pune, India, and technically sponsored by IEEE.
We are pleased to inform you that your paper entitled
Paper ID / Submission ID: 976
Title: An Intelligent Waste Collection System Leveraing IoT and Real-Time Monitoring
has been accepted with minor revisions.

Revised manuscript doesn't contain author names and details. Kindly add exactly same authors in same sequence as given in original paper and resubmit the revised paper in CMT. Kindly note that change in number of authors, names of authors and sequence of authors are not permitted

With best regards,
Chief Patron
Dr. Suhas Khot
Principal-KJCOEMR
&
Chairs, IGNITE-2K26
Dr. Nikita Kulkarni(+91 91752 95782)
Dr.Pramod Chavan(+91 88888 98098)
Dr.Shankar Amalraj(+91 78948 92759)
Prof.Rahimraja G Shaikh(+91 77982 48033)

KJ College of Engineering and Management Research
Pune | Maharashtra | INDIA
E-mail: | ignite2026.kjcoemr@kjei.edu.in | Website: https://www.kjei.edu.in/kjcoemr/

Please do not reply to this email as it was generated from an email account that is not monitored.

To stop receiving conference emails, you can check the 'Do not send me conference email' box from your User Profile.

Microsoft respects your privacy. To learn more, please read our Privacy Statement.

Microsoft Corporation
One Microsoft Way
Redmond, WA 98052

An Intelligent Waste Collection System Leveraging IoT and Real-Time Monitoring

Nikita Patil
Department of Computer Science and Engineering (Artificial Intelligence and Machine Learning)
AP Shah Institute of Technology
Thane, India
nikitapatil79@apsit.edu.in

Neha Sirsat
Department of Computer Science and Engineering (Artificial Intelligence and Machine Learning)
AP Shah Institute of Technology
Thane, India
nehasirsat80@apsit.edu.in

Aryan Kharat
Department of Computer Science and Engineering (Artificial Intelligence and Machine Learning)
AP Shah Institute of Technology
Thane, India
23206001@apsit.edu.in

Prof. Sumeet Shingi
Department of Computer Science and Engineering (Artificial Intelligence and Machine Learning)
AP Shah Institute of Technology
Thane, India
svshingi@apsit.edu.in

Abstract— Managing municipal waste is a tough task using old methods like fixed collection routes. These methods often lead to overflowing bins and wasted fuel. In this project, we built an "IoT-Based Smart Waste Management System" to solve these issues. We used ESP32 microcontrollers connected to Ultrasonic sensors (to check garbage levels) and Flame sensors (to detect fire).

For the software, we created a full-stack web application using Node.js and Express.js. We stored all the data in a MongoDB Atlas cloud database. A key feature of our system is security; we used JSON Web Tokens (JWT) to make sure only authorized people can access it. The system provides three different dashboards: one for officers to monitor bins, one for drivers to see routes, and one for citizens to report problems. By testing this prototype, we showed that automating waste collection can save money and keep the city cleaner.

Keywords— IoT, Waste Management, Smart Bin, Realtime Monitoring, Role-based Access.

I. Introduction

Managing solid waste has become a serious challenge for modern society. This is mainly due to rapid urbanization, industrial growth, and the fast-growing population in both cities and rural areas. The old ways of managing waste rely on checking bins manually and collecting garbage on fixed schedules. These methods are becoming inefficient, often resulting in overflowing bins, environmental pollution, and serious risks to public health.

Currently, municipal authorities use traditional methods where garbage trucks follow strict routes every day, regardless of whether the bins are full or empty. This approach wastes a lot of time, labor, and fuel. It also increases operational costs and carbon emissions. To solve the need for a better and sustainable solution, this project introduces an IoT-Based Smart Waste Management System. This system changes the traditional infrastructure into an intelligent, automated network.

By using the Internet of Things (IoT), we created a "smart city" environment where devices can exchange data without needing human help. The technical design of our system is divided into three main layers: 1. Device Layer: We used ESP32 microcontrollers connected to ultrasonic sensors to monitor how full the bins are, and flame sensors to detect fire hazards. 2. Application Layer: This is powered by a Node.js and Express.js backend, along with a responsive frontend interface. 3. Cloud Layer: We utilized MongoDB Atlas for scalable data storage and Vercel to handle continuous updates and deployment.

Our system uses Role-Based Access Control (RBAC) to provide specific dashboards for different users. Municipal Officers can plan schedules based on real-time data, Drivers can follow better routes, and Citizens can report local issues. To keep the system secure, we implemented JSON Web Tokens (JWT) for encrypted authentication, which stops unauthorized access to sensitive data.

By using RESTful APIs to connect the hardware with the software, our system removes the need for manual inspection. This directly reduces fuel consumption and makes the process more transparent. Ultimately, this project is a strong example of how digital technology can solve real-world urban problems, helping to build smarter, cleaner, and more efficient cities for the future.

II. Literature Survey

Ideally, smart cities need smart waste management. Many researchers have tried to solve the garbage collection problem using IoT. For example, Navghane et al. [1] and Kumar & Jain [8] showed how ultrasonic sensors can measure garbage levels. Their work proved that using sensors is better than manual checking. However, early projects like these only focused on the hardware and sensors.

Later, Longhi et al. [2] suggested using wireless networks to connect these bins. But as Anagnostopoulos et al. [3] pointed out, sending data from thousands of bins can be difficult without a good server.

Modern solutions try to fix this by using cloud databases. Chodorow [13] mentioned that databases like MongoDB are great for handling large amounts of sensor data. Also,

simply measuring the garbage level is not enough. We also need to check for safety issues like fire, which was discussed by Zanella et al. [6]. Recent advancements in municipal solid waste management have increasingly integrated Internet of Things (IoT) frameworks and machine learning algorithms. Borojeni and Abdi [16] designed an IoT-WMS system that utilizes ultrasonic sensors to determine bin capacity, seamlessly streamlining the routing process for garbage collection vehicles. To address the challenges of long-range communication and power efficiency, Laha et al. [17] proposed a framework combining IoT with LoRaWAN technology to optimize collection routes in green city projects. Furthermore, Gurupriya and Yadav [18] demonstrated the cost-effectiveness of using ESP8266 microcontrollers for real-time waste monitoring and cloud synchronization. Moving beyond basic collection, Uthayakumar et al. [19] integrated AI and IoT sensors to achieve automated waste segregation, highlighting the potential for advanced recycling mechanisms. Finally, Alowayr [20] emphasized that deploying IoT-enabled smart bins alongside dynamic route selection algorithms significantly reduces operational fuel costs and minimizes environmental emissions in smart cities.

One big missing piece in many existing systems is security. Most projects do not strictly control who can access the data. Our project improves on these previous ideas by adding a secure login system (using JWT) and separating the dashboards for drivers and officials.

III. Limitations of Existing System

Currently, the municipal waste management system works on a manual and static model. Garbage collection trucks follow a fixed, pre-decided route every day, regardless of whether the dustbins are full or empty. This creates a major efficiency problem. Trucks often visit empty bins, which leads to a huge waste of fuel, labor, and valuable time. Since there is no real-time visibility, authorities do not know when a bin is full. As a result, bins often overflow in busy areas, causing environmental pollution, bad odors, and serious health risks for the public. Additionally, the traditional system has no safety features; for example, if a fire breaks out inside a bin due to waste heat, there is no way to detect it immediately. These unoptimized operations increase the operational cost for the city and also increase the carbon footprint, making the current method unsustainable for modern cities.

Although our proposed "IoT-Based Smart Waste Management System" solves these issues using automation, it also has some inherent limitations. First, the system relies heavily on a stable internet connection. If the network is weak, the ESP32 microcontroller cannot send data to the MongoDB cloud database. Second, the hardware components, specifically the ultrasonic and flame sensors, are sensitive to the environment. Dust, moisture, or heavy rain can affect their accuracy over time, so they require regular maintenance. Furthermore, while our web application allows officers to monitor bins, the current version does not support automatic waste segregation (separating wet and dry waste). Also, setting up this IoT network across an entire city requires a significant initial investment. Lastly, the system currently suggests routes based on data, but it requires future integration with live GPS navigation to fully automate the driving directions for truck drivers.

IV. Problem Statement and Objectives

A. Problem Statement:

The amount of waste generated in cities is increasing rapidly, and the traditional methods used by municipal corporations are struggling to keep up. Currently, garbage collection relies on static schedules where trucks visit areas blindly. Since there is no way to check the bin status remotely, trucks often arrive too late, leading to overflowing bins that create unsanitary conditions and bad odors. On the other hand, trucks sometimes visit empty bins, which is a waste of fuel and manpower. To solve these inefficiency problems, this project presents an IoT-based Waste Management Solution. We use ultrasonic sensors to check fill levels and flame sensors to detect fire risks. By connecting a Node.js backend with a MongoDB database, our system allows for data-based route planning. This smart approach minimizes human error, saves fuel, and improves public health by ensuring timely cleaning.

B. Objectives

- To build a working smart waste management system that uses IoT sensors to track the status of garbage bins in real-time.
- To accurately measure how full a bin is using ultrasonic sensors and detect any fire accidents using flame sensors for safety.
- To create an easy-to-use web application that provides specific dashboards for municipal officers, drivers, and citizens to manage and view data.

V. Proposed System

A. System Overview

Our "IoT-Based Smart Waste Management System" is built using three main components: the hardware sensors, a web application with multiple roles (Officer, Driver, Citizen), and a cloud database for analytics. In the hardware section, we used the ESP32 microcontroller connected to ultrasonic and flame sensors. These sensors constantly check the bin levels and fire status and send this data to the cloud. Municipal officers have a main dashboard where they can see live updates and plan schedules. Drivers get a separate view to see their routes. Citizens also have a portal to check bin locations. The entire backend runs on Node.js and Express.js with MongoDB Atlas storing the data. This setup ensures that data flows smoothly from the bin to the user, using secure login methods (JWT) to keep the information safe.

B. Analytics Features

The admin dashboard is designed to show the following reports:

- Perception Layer (Hardware): This includes the ESP32 microcontroller with Ultrasonic sensors (for checking trash volume) and Flame sensors (for fire safety). These act as the eyes of the system, capturing live data from the environment.

- Network & Transport Layer: We used the Wi-Fi feature of the ESP32 to send data to the server via API calls. This layer ensures that the connection between the bin and our Node.js server is fast and secure.
- Application & Analytics Layer: This is the website that users see, hosted on Vercel. It uses the MongoDB database to save records. It takes the raw numbers from sensors and turns them into easy-to-read graphs for the Municipal officers and Drivers.

C. COMPREHENSIVE EXPERIMENTAL SETUP AND SYSTEM INTEGRATION

The experimental setup for this architecture was designed as a multi-layered framework connecting physical sensor nodes with cloud-based infrastructure, creating a comprehensive ecosystem for municipal sanitation. A high-performance ESP32 microcontroller was utilized as the core hardware gateway due to its dual-core processing capabilities and integrated Wi-Fi module, making it highly suitable for IoT applications. For volumetric waste measurement, an HC-SR04 ultrasonic sensor was mounted at the top center of the bin lid. This sensor calculates the fill level by measuring the time-of-flight of ultrasonic pulses reflected from the waste surface. Additionally, a highly sensitive flame sensor was integrated to detect infrared emissions from potential fires, enabling the system to trigger immediate emergency alerts.

On the software front, a robust backend environment was developed using Node.js and Express.js, providing a scalable RESTful API for bidirectional communication between the hardware node and the centralized user dashboard. A MongoDB Atlas cluster was employed for data persistence, utilizing a document-oriented structure for the efficient retrieval of sensor logs, driver schedules, and user credentials. Data transmission occurs over a secured 2.4 GHz Wi-Fi network, with the ESP32 transmitting encrypted payloads. Furthermore, all API requests are authenticated using JSON Web Tokens (JWT) to mitigate unauthorized access attempts.

During the experimental phase, the system was calibrated for high-frequency sensor polling, incorporating algorithmic filtering to discard anomalous data spikes caused by uneven waste surfaces. The sanitized data is transmitted to a frontend web application developed with HTML5, CSS3, and JavaScript, and hosted on the Vercel platform. The interface dynamically updates the real-time status of the bins without requiring manual page refreshes, effectively functioning as a digital twin of the physical infrastructure.



Fig 1. Physical Hardware Setup of the Smart Waste Bin

D. PERFORMANCE EVALUATION AND SYSTEM TESTING

To address real-world applicability and validate the operational efficacy of the proposed system, comprehensive empirical testing was conducted. The precision of the ultrasonic sensor was evaluated under varying waste accumulation levels, demonstrating a high measurement accuracy with an error margin of less than ±2 cm. Additionally, the data transmission latency between the ESP32 module and the MongoDB database was assessed. Under standard network conditions, the average latency was recorded between 150 and 200 milliseconds, ensuring near real-time synchronization. System robustness was further verified by simulating temporary network outages; the ESP32 successfully re-established connectivity and synchronized pending data without packet loss, proving the system's readiness for real-world deployment.

VI. METHODOLOGY

We built the system by connecting hardware components with cloud software. Our development process followed these specific steps:

A. Setting up the Hardware First, we worked on the data collection part. We used the ESP32 microcontroller because it has built-in Wi-Fi. We connected it to an HC-SR04 Ultrasonic Sensor. This sensor sends out sound waves to measure the distance to the garbage surface. We wrote code to convert this distance into a percentage (0% to 100% full). To prevent false readings due to uneven garbage, we added a simple filter in the code to smooth out the values. We also attached a Flame Sensor to the ESP32 to trigger an alert if it detects fire inside the bin.

B. Backend and Database Once the hardware was ready, we needed a place to send the data. We chose Node.js with Express.js for the server because it handles multiple

requests quickly. For storage, we used MongoDB Atlas. We designed a database schema that stores the Bin ID, Fill Level, Fire Status, and a Timestamp.

C. Data Transmission The ESP32 sends data to our server using HTTP POST requests. We created a specific API endpoint (/api/sensors/add) to receive this. To ensure security, the hardware sends a secure token (JWT) with every request. The server checks this token before saving any data.

D. Frontend Dashboard Finally, we created the user interface using HTML, CSS, and JavaScript. We hosted the frontend on Vercel. The dashboard automatically fetches fresh data from the API every few seconds. This allows the municipal authority to see the bin status change in real-time without refreshing the page.

A. Data Collection and Logging

The Data Collection and Logging phase is the backbone of the system, ensuring the accurate capture and persistence of environmental telemetry. At the hardware level, data is collected via an ESP32 microcontroller which polls the HCSR04 Ultrasonic sensor and Flame sensor at regular intervals. The raw distance values are converted into fill-level percentages, while the flame sensor monitors for binary hazard triggers. This data is then encapsulated into JSON payloads and transmitted through HTTP POST requests to the backend's /api/sensors/add endpoint.

On the server side, the Node.js/Express.js application validates the incoming data using JWT authentication to ensure that only authorized hardware nodes can log information. Once validated, each entry is timestamped and logged into a MongoDB Atlas collection. The database schema is designed for high-performance retrieval, storing critical fields such as binID, fillLevel, flameStatus, and timestamp. This systematic logging approach not only enables real-time monitoring on the frontend dashboard but also builds a historical dataset for long-term waste generation trend analysis and predictive scheduling.

B. Data Processing

The IoT Waste Management System operates through a seamless, end-to-end integration of hardware sensing, cloud computing, and real-time web visualization. The process initiates at the Physical Layer, where the ESP32 microcontroller acts as an edge gateway, continuously polling data from the HC-SR04 Ultrasonic sensor to measure waste volume and the Flame sensor to detect fire hazards. This raw telemetry is processed at the edge to filter signal noise and is then transmitted via a secured Wi-Fi connection as JSON payloads to the backend.

The Software Layer, powered by Node.js and Express.js, serves as the central intelligence hub. Upon receiving the data, the server validates the hardware's identity using JWT (JSON Web Tokens) and commits the records to a MongoDB Atlas cloud database. This ensures that the data is not only stored securely but is also accessible globally. Simultaneously, the Frontend Layer, built with HTML5, CSS3, and JavaScript and hosted on Vercel, fetches this live data through RESTful APIs. This allows Municipal Authorities and Drivers to monitor bin levels in real-time, receive instant emergency alerts, and optimize collection routes based on actual demand.

The entire ecosystem is unified by a CI/CD pipeline via GitHub, ensuring that any software updates are automatically deployed to the live environment. By bridging the gap between physical sensors and a cloud-hosted dashboard, the system automates the waste lifecycle—from detection and logging to visualization and proactive collection—making urban sanitation more efficient and data-driven.

.

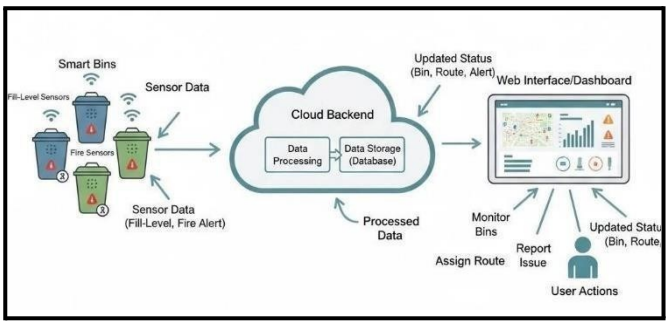

Fig 2. Workflow diagram

C. User Authentication and Role-Based Access Control

Security is a key part of our system. As shown in the login interface figure, we designed a simple but secure entry point for all users. The main feature here is the "Role Selection" dropdown menu. Before logging in, a user must choose their identity: Municipal Authority, Driver, or Citizen. This step is crucial because it tells the backend which permissions to grant.

Below the role selection, users enter their email and password. We also included a "Register" option for new users and a "Test Backend" button on the top bar to quickly check if the server is online. When a user clicks the "Login" button, the system sends their credentials to the Node.js server. If the email and password match, the server generates a unique JSON Web Token (JWT).

Once authenticated, the system automatically redirects the user to the correct dashboard:

- Authorities see the main analytics page with all bin data.
- Drivers see the route map.
- Citizens see the grievance reporting page.

This logic ensures that sensitive data remains safe and users only see what is relevant to them.

.

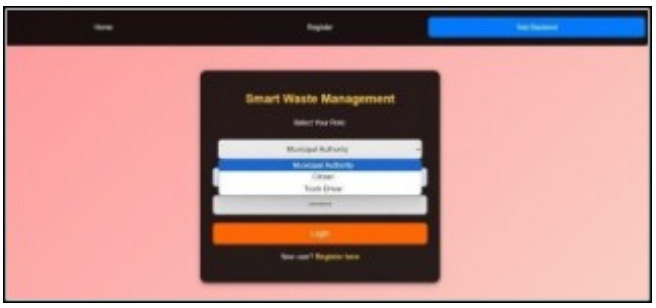

Fig 3. Unified Login Interface with Role-Based Access Selection

The images illustrate the Role-Based Authentication flow. Users first interact with a dynamic dropdown to select one of three designations: Municipal Authority, Citizen, or Truck Driver.

Once a role is selected, the interface captures the choice to trigger the Role-Based Access Control (RBAC) logic. This ensures that after a successful login, the Node.js backend redirects the user to their specific dashboard—such as waste analytics for authorities or route maps for drivers— ensuring a secure and personalized entry into the system.

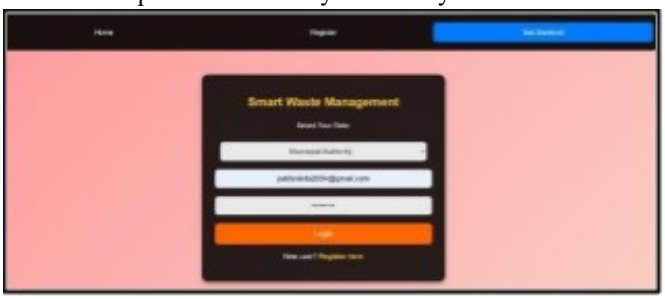

Fig 4. Interactive Role Selection Menu for Stakeholder Identification

After a successful login, the user is taken to the main Monitoring Dashboard. This page fetches the latest data directly from our MongoDB Atlas database and shows it in a simple table format.

As seen in the output image, the table displays the most important details:

- Bin Location: To know exactly where the garbage is.
- Fill Level (%): To check how much space is left in the bin.
- Flame Status: To see if there is any fire warning.

This direct connection between the hardware sensors and the website helps municipal officers make quick decisions. Instead of sending trucks blindly, they can now check this dashboard and send vehicles only to the locations that are actually full.

.

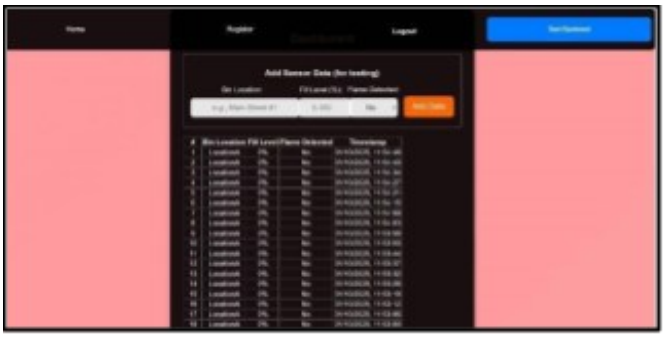

Fig 5. Real-Time Monitoring Dashboard with Live Sensor Telemetry and Timestamp Logs

VII. CONCLUSION AND FUTURE WORK

Conclusion We have successfully developed an IoT-based system that replaces the traditional, manual way of collecting garbage. By connecting ultrasonic sensors and flame sensors to the cloud, our project ensures that waste collection is done based on actual need, not just a fixed schedule. The testing phase confirmed that the ESP32 microcontroller accurately sends data to the MongoDB database using our Node.js backend. We also secured the platform using JWT, ensuring that authorities, drivers, and citizens have safe and separate access to the system. This project proves that technology can significantly reduce fuel wastage and operational costs while keeping the city safer from fire hazards.

Future Work While the current system works well as a prototype, we plan to add more features in the future to make it even better:

- GPS Integration: Currently, drivers have to check the dashboard. In the future, we want to link this with Google Maps to automatically guide trucks to the full bins.
- Automatic Segregation: We aim to add sensors that can separate wet and dry waste automatically at the source.
- Mobile Application: Right now, we have a website. Developing a dedicated mobile app would make it easier for drivers and citizens to use the system on the go.

VII. REFERENCES

[1] S. S. Navghane, M. S. Killedar, and V. M. Rohokale, "IoT Based Smart Garbage and Waste Collection Bin," *Int. J. Adv. Res. Electron. Commun. Eng.*, vol. 5, no. 5, 2016.

[2] S. Longhi, D. Marzioni, E. Alidori, G. DiDomenico, M. Palmerini, and L. Gambi, "Solid Waste Management Architecture Using Wireless Sensor Networks," *IEEE Sensors Journal*, 2012.

[3] T. Anagnostopoulos, A. Zaslavsky, K. Kolomvatsos, A. Medvedev, P. Amiriparian, J. Morley, and S. Hadjiefthymiades, "Challenges and Opportunities of Waste Management in Smart Cities," *IEEE Transactions on Sustainable Computing*, 2017.

[4] J. Gubbi, R. Buyya, S. Marusic, and M. Palaniswami, "Internet of Things (IoT): A Vision, Architectural Elements, and Future Directions," *Future Generation Computer Systems*, 2013.

[5] A. Al-Fuqaha, M. Guizani, M. Mohammadi, M. Aledhari, and M. Ayyash, "Internet of Things: A Survey on Enabling Technologies, Protocols, and Applications," *IEEE Communications Surveys & Tutorials*, 2015.

[6] A. Zanella, N. Bui, A. Castellani, L. Vangelista, and M. Zorzi, "Internet of Things for Smart Cities," *IEEE Internet of Things Journal*, 2014.

[7] S. M. R. Islam, D. Kwak, M. D. H. Kabir, M. Hossain, and K. S. Kwak, "The Internet of Things for Health Care: A Comprehensive Survey," *IEEE Access*, 2015.

[8] S. Kumar and P. Jain, "Smart Waste Management System Using IoT," *International Journal of Engineering Research & Technology (IJERT)*, 2018.

[9] M. Patel, J. Doshi, and J. Vala, "IoT Based Smart Garbage Monitoring System," *International Journal of Computer Applications*, 2017.

[10] R. T. Fielding, "Architectural Styles and the Design of Network-based Software Architectures," Ph.D. dissertation, University of California, Irvine, 2000.

[11] D. Hardt, "The OAuth 2.0 Authorization Framework," IETF, RFC 6749, 2012.

[12] M. Jones, J. Bradley, and N. Sakimura, "JSON Web Token (JWT)," IETF, RFC 7519, 2015.

[13] K. Chodorow, *MongoDB: The Definitive Guide*, 2nd edition, O'Reilly Media, 2013.

[14] S. Tilkov and S. Vinoski, "Node.js: Using JavaScript to Build High-Performance Network Programs," *IEEE Internet Computing*, 2010.

[15] L. Atzori, A. Iera, and G. Morabito, "The Internet of Things: A Survey," *Computer Networks*, 2010.

[16] G. P. Borojeni and A. Abdi, "IoT-WMS: Design and Implementation of an IoT-based Smart Waste Management System," *2024 8th International Conference on Smart Cities, Internet of Things and Applications (SCIoT)*, 2024.

[17] S. R. Laha, B. K. Pattanayak, and S. Kumar, "A Smart Waste Management System Framework Using IoT and LoRa for Green City Project," *Int. J. Recent Innov. Trends Comput. Commun.*, 2023.

[18] M. Gurupriya and K. Yadav, "A Smart Waste Management System Using ESP8266," *2024 4th International Conference on Sustainable Expert Systems (ICSES)*, 2024.

[19] G. Uthayakumar et al., "Smart Waste Revolution: AI-Powered Biomedical Segregation and Recycling with IoT Integration," *SSRG Int. J. Mech. Eng*, 2024.

[20] A. S. Alowayr, "A Proposed IoT-Enabled Smart Waste Bin Management System and Efficient Route Selection," *IEEE Access*, 2023.

Acknowledgements

We make a move to offer our genuine thanks to **Prof. Sumeet Shingi** for his important direction in this task. We are especially appreciative for his untiring help with this project as well as for empowering us in taking out the mistake and kept our advancement on plan. We are likewise thankful for the co-activity and significant help delivered by **Prof. Sayali Badhan** as Project Co-ordinator & **Dr. Jaya Gupta** as Head of the Department. We might want to offer our unique gratitude to the next instructing and non- showing staff of the AIML Department for their valuable help in the finish of this task. At long last, we are enormously obliged to the administration of our school and express our appreciation to the Principal **Dr. Uttam Kolekar** for organizing and giving essential office in finishing this venture work. We wish to recognize the assistance gave by our kindred schoolmates to aiding the assets while finishing this undertaking. We truly thank all other people who have assisted us in this venture with working.

Nikita Patil 22106081

Neha Sirsat 22106082

Aryan Kharat 23206001

Date: